A REAL-TIME IoT-BASED SPATIO-TEMPORAL DEEP LEARNING FRAMEWORK FOR GROUNDWATER LEVEL AND QUALITY PREDICTION

A THESIS

Submitted by

HARIRAM S

in partial fulfillment for the award of the degree of

MASTER OF ENGINEERING IN COMPUTER SCIENCE AND ENGINEERING

DEPARTMENT OF COMPUTER SCIENCE AND ENGINEERING
ANNA UNIVERSITY, CHENNAI

APRIL 2026

ANNA UNIVERSITY, CHENNAI

BONAFIDE CERTIFICATE

Certified that this Thesis titled "**A REAL-TIME IoT-BASED SPATIO-TEMPORAL DEEP LEARNING FRAMEWORK FOR GROUNDWATER LEVEL AND QUALITY PREDICTION**" is the bonafide work of **HARIRAM S (2024207029)** who carried out the work under my supervision. Certified further that to the best of my knowledge the work reported herein does not form part of any other thesis or dissertation on the basis of which a degree or award was conferred on an earlier occasion on this or any other candidate.

Dr. V. Mary Anita Rajam
Professor and Head
Department of Computer Science and Engineering
Anna University
Chennai – 600 025

Dr. K. Saravanan
Associate Professor
Department of Computer Science and Engineering
Anna University
Chennai – 600 025

ACKNOWLEDGEMENT

We are extremely grateful to **Dr. V. Mary Anita Rajam,** Professor & Head of the Department, Department of Computer Science and Engineering, Anna University, Chennai – 25, for extending the facilities of the Department towards our project and for her unstinting support.

We express our thanks to the panel of reviewers **Dr. S. Bose**, Professor, Department of Computer Science and Engineering, **Dr. R. Baskaran**, Professor, Department of Computer Science and Engineering, and **Dr. P. Velvizhy**, Assistant Professor, Department of Computer Science and Engineering, for their valuable suggestions and critical reviews throughout the course of our project.

We express our deep gratitude to our guide, **Dr. K. Saravanan**, Associate Professor, Department of Computer Science and Engineering, for guiding us through every phase of the project. We appreciate his thoroughness, tolerance, and ability to share his knowledge with us. We would also like to thank him for his kind support and for providing necessary facilities to carry out the work.

We express our thanks to all other teaching and non-teaching staff who helped us in one way or another for the successful completion of the project. We would also like to thank our parents, family, and friends for their indirect contribution to the successful completion of this project.

HARIRAM S

ABSTRACT – ENGLISH

Groundwater is a critical natural resource that supports domestic, agricultural, and industrial activities. However, increasing demand, over-extraction, and industrial contamination have significantly impacted groundwater availability and quality. Traditional monitoring systems are manual, periodic, and lack predictive intelligence. This project presents a real-time IoT-based spatio-temporal deep learning framework for groundwater level and quality prediction. The system integrates IoT sensors for continuous data acquisition, edge computing for signal conditioning, secure communication for data transmission, and cloud storage for scalable data management. Advanced preprocessing techniques are applied to enhance data quality, followed by spatial feature integration to incorporate geographical intelligence. Multiple deep learning models including LSTM, CNN-LSTM, ensemble models, and anomaly detection mechanisms are employed to generate accurate predictions. The system also includes a web-based dashboard for visualization and real-time alert generation. Compared to Phase I, this phase provides a fully implemented, real-time, end-to-end intelligent groundwater monitoring system, demonstrating improved accuracy, scalability, and practical applicability.

ABSTRACT – TAMIL

நிலத்தடி நீர் என்பது வீட்டு உபயோகம், விவசாயம் மற்றும் தொழில்துறை நடவடிக்கைகளுக்கு ஆதரவளிக்கும் ஒரு முக்கியமான இயற்கை வளமாகும். இருப்பினும், அதிகரித்து வரும் தேவை, அதிகப்படியான உறிஞ்சுதல் மற்றும் தொழில்துறை மாசுபாடு ஆகியவை அதன் இருப்பு மற்றும் தரத்தை பாதித்துள்ளன. பாரம்பரிய கண்காணிப்பு அமைப்புகள் கைமுறையாகவும், குறிப்பிட்ட கால இடைவெளியிலும் நடைபெறுகின்றன மற்றும் முன்கணிப்பு நுண்ணறிவு இல்லாதவையாக உள்ளன. இந்தத் திட்டம், நிலத்தடி நீர் மட்டம் மற்றும் தரத்தை முன்கணிப்பதற்காக நிகழ்நேர IoT அடிப்படையிலான இட-கால ஆழ்நிலை கற்றல் கட்டமைப்பை முன்வைக்கிறது. இதில் IoT சென்சார்கள் மூலம் தொடர்ச்சியான தரவு சேகரிப்பு, எட்ஜ் கம்ப்யூட்டிங் மூலம் சிக்னல் சீரமைப்பு, பாதுகாப்பான தகவல்தொடர்பு மற்றும் கிளவுட் ஸ்டோரேஜ் ஆகியவை ஒருங்கிணைக்கப்படுகின்றன. தரத்தின் நம்பகத்தன்மையை உயர்த்த முன்செயலாக்க நுட்பங்கள் மற்றும் இடஞ்சார்ந்த அம்சங்கள் பயன்படுத்தப்படுகின்றன. LSTM, CNN-LSTM, என்செம்பிள் மாதிரிகள் மற்றும் முரண்பாடு கண்டறிதல் முறைகள் ஆகியவை துல்லியமான முன்கணிப்புகளுக்காக பயன்படுத்தப்படுகின்றன. மேலும், காட்சிப்படுத்தல் மற்றும் நிகழ்நேர எச்சரிக்கைகளுக்காக வலை அடிப்படையிலான டாஷ்போர்டும் அமைக்கப்பட்டுள்ளது. முதல் கட்டத்துடன் ஒப்பிடுகையில், இந்தக் கட்டம் முழுமையான நிகழ்நேர நுண்ணறிவு அமைப்பாக உருவாக்கப்பட்டுள்ளது, இது மேம்பட்ட துல்லியம், அளவீட்டு திறன் மற்றும் நடைமுறைப் பயன்பாட்டை வழங்குகிறது.

TABLE OF CONTENTS

CHAPTER NO.	TITLE	PAGE NO.
	ABSTRACT – ENGLISH	**iv**
	ABSTRACT – TAMIL	**v**
	LIST OF FIGURES	**xi**
	LIST OF TABLES	**xiii**
	LIST OF ABBREVATIONS	**xiv**
1	**INTRODUCTION**	**1**
	1.1 BACKGROUND OF THE STUDY	1
	1.2 PROBLEM STATEMENT	2
	1.3 OBJECTIVES OF THE STUDY	2
	1.4 SCOPE AND LIMITATIONS	3
	1.5 ORGANIZATION OF THE THESIS	4
2	**LITERATURE REVIEW**	**6**
	2.1 INTRODUCTION	6
	2.2 CLUSTERED SURVEY	6
	2.2.1 IOT-BASED REAL-TIME WATER AND GROUNDWATER QUALITY MONITORING SYSTEMS	6
	2.2.2 DEEP LEARNING MODELS FOR GROUNDWATER LEVEL PREDICTION	7
	2.2.3 SPATIAL AND GEOSPATIAL INTELLIGENCE IN GROUNDWATER ANALYSIS	7

	2.2.4 MACHINE LEARNING AND GIS-BASED GROUNDWATER QUALITY PREDICTION SYSTEMS	7
	2.2.5 INTEGRATED IOT MACHINE LEARNING FRAMEWORKS AND SYSTEM LEVEL REVIEWS	8
	2.3 IDENTIFIED RESEARCH GAPS	8
	2.4 CONCLUSION	12
3	**THEORETICAL BASIS AND CONCEPTUAL STRUCTURE**	**13**
	3.1 INTRODUCTION	13
	3.2 THEORETICAL BASIS	13
	3.3 CONCEPTUAL STRUCTURE OF THE PROPOSED SYSTEM	14
	3.4 OVERALL FRAMEWORK	15
	3.5 CONCLUSION	15
4	**METHODOLOGY**	**16**
	4.1 INTRODUCTION	16
	4.2 OVERALL METHODOLOGY	16
	4.3 DATA ACQUISITION AND PREPROCESSING	17
	4.4 SPATIAL FEATURE INTEGRATION	17
	4.5 MODEL DEVELOPMENT	18
	4.6 VISUALIZATION AND ALERT SYSTEM	18
	4.7 CONCLUSION	18

5	**SYSTEM ARCHITECTURE, MODULE DESIGN AND ALGORITHMS**	**19**
	5.1 OVERVIEW	19
	5.2 SYSTEM ARCHITECTURE	19
	5.3 MODULE DESCRIPTION	21
	5.3.1 SENSING LAYER	21
	5.3.2 EDGE LAYER	22
	5.3.3 COMMUNICATION LAYER	23
	5.3.4 STORAGE LAYER	24
	5.3.5 PREPROCESSING LAYER	24
	5.3.6 SPATIAL LAYER	25
	5.3.7 MODEL BUILDING LAYER	26
	5.3.8 APPLICATION LAYER	26
	5.4 ALGORITHMIC FRAMEWORK	28
	5.4.1 END TO END FRAMEWORK	29
	5.4.2 ALGORITHM OF SENSING LAYER	29
	5.4.3 ALGORITHM OF EDGE LAYER	30
	5.4.4 ALGORITHM OF COMMUNICATION LAYER	30
	5.4.5 ALGORITHM OF STORAGE LAYER	31
	5.4.6 ALGORITHM OF PREPROCESSING LAYER	31
	5.4.7 ALGORITHM OF SPATIAL LAYER	32
	5.4.8 ALGORITHM OF MODEL BUILDING LAYER	33

	5.4.9 ALGORITHM OF APPLICATION LAYER	33
	5.4.10 COMPUTATIONAL COMPLEXITY ANALYSIS	34
	5.5 CONCLUSION	34
6	**IMPLEMENTATION**	**35**
	6.1 INTRODUCTION	35
	6.2 HARDWARE	35
	6.3 SOFTWARE	35
	6.4 DATA GENERATION AND HANDLING	36
	6.5 DATA PREPROCESSING IMPLEMENTATION	36
	6.6 SPATIAL FEATURE IMPLEMENTATION	37
	6.7 MODEL IMPLEMENTATION	37
	6.8 VISUALIZATION AND ALERT SYSTEM IMPLEMENTATION	37
	6.9 SYSTEM INTEGRATION	38
	6.10 CONCLUSION	38
7	**RESULTS AND DISCUSSION**	**39**
	7.1 DATA ACQUISITION RESULTS	39
	7.2 DATA PREPROCESSING RESULTS	39
	7.3 MULTI-WELL TEMPORAL ANALYSIS	40
	7.4 CORRELATION ANALYSIS OF GROUNDWATER PARAMETERS	42
	7.5 TIME-SERIES DECOMPOSITION ANALYSIS	42

	7.6 REAL-TIME DASHBOARD ANALYSIS	44
	7.7 SCENARIO SIMULATION	45
	7.8 SPATIO-TEMPORAL HEATMAP AND INTERPOLATION ANALYSIS	45
	7.9 MODEL TRAINING RESULTS	46
	7.10 PREDICTION RESULTS	47
	7.11 DASHBOARD VISUALIZATION RESULTS	47
	7.12 ALERT SYSTEM RESULTS	48
	7.13 PERFORMANCE ANALYSIS	48
8	**CONCLUSION**	**50**
	REFERENCES	**51**

LIST OF FIGURES

FIGURE NO.	DESCRIPTION	PAGE NO.
5.1	Detailed System Architecture	19
5.2	Sensing Layer	22
5.3	Edge Layer	23
5.4	Communication Layer	23
5.5	Storage Layer	24
5.6	Preprocessing Layer	25
5.7	Spatial Layer	25
5.8	Model Building Layer	26
5.9	Application Layer	27
5.10	End-to-End Framework Algorithm	28
5.11	Sensing Layer Algorithm	29
5.12	Edge Layer Algorithm	29
5.13	Communication Layer Algorithm	30
5.14	Storage Layer Algorithm	30
5.15	Preprocessing Layer Algorithm	31
5.16	Spatial Layer Algorithm	31
5.17	Model Building Layer Algorithm	32
5.18	Application Layer Algorithm	33
7.1	Real-Time Groundwater Data	39
7.2	Pre-processed Real-Time Groundwater Data	40
7.3	Multi-Well Water Level Analysis	41

7.4	Multi-Well EC Analysis	41
7.5	Correlation Matrix of Groundwater Parameters	42
7.6	Decomposition Analysis of Water Level	43
7.7	Decomposition Analysis of Turbidity	44
7.8	Groundwater Parameter and Prediction	44
7.9	Scenario Simulation Analysis	45
7.10	Spatio-Temporal Heatmap Analysis in Tiruppur	46
7.11	Training and Validation Loss Graph	46
7.12	Actual vs Prediction Graph	47
7.13	Dashboard	47
7.14	Alert Management System Dashboard	48
7.15	Model Performance Comparison (MAE & RMSE)	48

LIST OF TABLES

TABLE NO.	DESCRIPTION	PAGE NO.
2.1	Literature Survey	9
4.1	Performance Evaluation	49

LIST OF ABBREVIATIONS

ABBREVIATION	EXPANSION
IoT	Internet of Things
LSTM	Long Short-Term Memory
CNN	Convolutional Neural Network
TDS	Total Dissolved Solids
EC	Electrical Conductivity
pH	Potential of Hydrogen
GPS	Global Positioning System
GSM	Global System for Mobile Communications
LoRa	Long Range Communication
ADC	Analog-to-Digital Converter
RMSE	Root Mean Square Error
MAE	Mean Absolute Error
GIS	Geographic Information System

CHAPTER 1
INTRODUCTION

1.1 BACKGROUND OF THE STUDY

Water is a fundamental natural resource that supports human life, agriculture, and industrial development. Among all freshwater sources, groundwater plays a vital role, contributing significantly to drinking water supply and irrigation needs. In India, a major portion of rural water demand and agricultural requirements depends on groundwater. However, excessive extraction, inadequate recharge, and contamination from industrial and agricultural activities have led to a decline in groundwater levels and deterioration of water quality.

Tamil Nadu faces severe groundwater stress due to its semi-arid climate, irregular monsoon rainfall, and increasing population demand. The overdependence on groundwater for domestic, agricultural, and industrial purposes has resulted in unsustainable exploitation of aquifers.

Tiruppur district, known as the “Knitwear Capital of India,” represents a critical case due to its rapid industrialization and heavy reliance on groundwater. Extensive water usage in textile and dyeing industries has led to declining water tables, while improper effluent discharge has contributed to increased salinity and higher total dissolved solids (TDS). The region’s dependence on monsoon recharge and the absence of perennial rivers further intensify groundwater scarcity, especially under changing climatic conditions.

Conventional groundwater monitoring methods, which rely on periodic manual observations, are insufficient to capture real-time variations and complex interactions between environmental and industrial factors. These limitations highlight the need for intelligent, data-driven approaches for effective groundwater management.

To address this, the present Phase II study proposes a real-time IoT-based spatio-temporal deep learning framework for groundwater level and quality prediction. By integrating continuous data acquisition, advanced preprocessing, spatial intelligence,

and deep learning models, the system aims to provide accurate predictions and support informed decision-making in groundwater management.

1.2 PROBLEM STATEMENT

Groundwater resources in industrial and semi-arid regions such as Tiruppur are under increasing stress due to continuous extraction, irregular recharge, and contamination from industrial activities. The rapid expansion of textile and dyeing industries, combined with high domestic and agricultural demand, has resulted in significant fluctuations in groundwater levels and deterioration in water quality. Additionally, climate variability, including irregular rainfall patterns and rising temperatures, further complicates groundwater dynamics, making it difficult to manage resources effectively.

Existing groundwater monitoring practices primarily rely on manual sampling and periodic data collection, which are inadequate for capturing real-time variations and fail to provide timely insights for decision-making. Moreover, most existing predictive approaches focus either on groundwater level or water quality independently and lack integration of spatial and temporal factors. These methods also do not incorporate continuous data streams or advanced learning techniques capable of modeling complex, non-linear relationships in groundwater systems.

Therefore, there is a critical need for an integrated, real-time, and intelligent framework that can continuously monitor groundwater conditions and accurately predict both groundwater level and quality. This study addresses this gap by developing a real-time IoT-based spatio-temporal deep learning system that combines continuous data acquisition, spatial intelligence, and advanced predictive modeling to support efficient groundwater management and early warning mechanisms.

1.3 OBJECTIVES OF THE STUDY

The primary objective of this study is to develop an intelligent, real-time system for monitoring and predicting groundwater level and quality using IoT and deep learning techniques. The proposed framework aims to integrate continuous data acquisition, advanced data processing, and predictive modeling to provide accurate and timely insights for effective groundwater management.

The specific objectives of this study are as follows,

1. To design and implement an IoT-based sensing system for continuous acquisition of groundwater level and quality parameters.
2. To develop a reliable data pipeline that includes edge processing, secure communication, and cloud-based storage for real-time data management.
3. To perform advanced data preprocessing, including noise filtering, missing value handling, outlier removal, and temporal windowing, to improve data quality.
4. To incorporate spatial intelligence by integrating geographical features such as latitude, longitude, and location-based attributes into the prediction process.
5. To develop and evaluate deep learning models, including LSTM and CNN-LSTM, for accurate prediction of groundwater level and quality.
6. To enhance prediction performance using ensemble modeling and anomaly detection techniques.
7. To design and implement a web-based dashboard for real-time visualization of groundwater data and prediction results.
8. To develop an alert mechanism for early warning of abnormal groundwater conditions.
9. To validate the effectiveness, accuracy, and scalability of the proposed system under real-time conditions.

1.4 SCOPE OF THE STUDY

The scope of this study focuses on the design and implementation of a real-time IoT-based spatio-temporal deep learning framework for monitoring and predicting groundwater level and quality in the Tiruppur region of Tamil Nadu. The system is developed to continuously acquire groundwater parameters such as water level, pH, total dissolved solids (TDS), electrical conductivity, turbidity, and temperature through IoT-enabled sensing mechanisms, and to process this data for predictive analysis.

The study encompasses the integration of multiple components, including sensor data acquisition, edge-level processing, secure communication, and cloud-based data storage. It also includes the development of an advanced data preprocessing pipeline to

ensure data reliability and consistency. Spatial intelligence is incorporated by considering geographical attributes such as latitude, longitude, and location-based features, enabling location-aware prediction.

Furthermore, the scope includes the implementation of deep learning models, specifically LSTM and CNN-LSTM, along with ensemble and anomaly detection techniques, to accurately forecast groundwater conditions. The system also provides a web-based dashboard for real-time visualization and an alert mechanism for detecting abnormal patterns.

However, the scope of this work is limited to system development, model implementation, and validation under controlled real-time data conditions. Large-scale field deployment, long-term environmental impact analysis, and integration with external data sources such as satellite or government datasets are beyond the scope of this study and are considered for future work.

1.5 ORGANIZATION OF THE THESIS

This thesis is organized into several chapters, each focusing on different aspects of the proposed groundwater monitoring and prediction system.

- Chapter 1 presents the introduction to the study, including the background, problem statement, objectives, and scope, thereby establishing the motivation and significance of the research.
- Chapter 2 provides a comprehensive review of existing literature related to groundwater monitoring, IoT-based systems, deep learning techniques, and spatial analysis. It also identifies the research gaps that form the basis for the proposed work.
- Chapter 3 discusses the theoretical foundation and conceptual structure of the proposed system. It explains the integration of IoT, time-series analysis, deep learning models, and spatial intelligence within a unified framework.
- Chapter 4 describes the methodology adopted in this study, detailing the overall workflow, including data acquisition, preprocessing, spatial feature integration, model development, and visualization.

- Chapter 5 presents the system architecture, module design, and algorithmic framework. It elaborates on each layer of the system and provides detailed algorithms governing the end-to-end operation.
- Chapter 6 focuses on the implementation of the proposed system, including hardware components, software tools, data handling, preprocessing techniques, and model deployment.
- Chapter 7 discusses the results and performance evaluation of the system. It presents experimental outputs, visualization results, prediction accuracy, and performance metrics.
- Chapter 8 concludes the thesis by summarizing the key findings and contributions of the study, and outlines possible directions for future research.

CHAPTER 2
LITERATURE REVIEW

2.1 INTRODUCTION

Groundwater monitoring and prediction have become increasingly important due to growing water demand, industrialization, and climate variability. Traditional methods based on manual data collection are often inadequate to capture real-time changes and complex groundwater behavior. Recent advancements in IoT, machine learning, and deep learning have enabled continuous data collection and improved prediction accuracy. Additionally, the use of spatial information has enhanced the understanding of groundwater variations across different locations. This chapter reviews existing studies related to IoT-based monitoring, deep learning models, and spatial analysis techniques, and identifies the research gap addressed in this work.

2.2 CLUSTERED SURVEY

2.2.1 IOT-BASED REAL-TIME WATER AND GROUNDWATER QUALITY MONITORING SYSTEMS

With the advent of IoT technologies, several studies have proposed sensor-based frameworks for continuous monitoring of water quality parameters. These systems typically involve the deployment of sensors to measure parameters such as pH, turbidity, temperature, and total dissolved solids, with data transmitted to cloud platforms for storage and analysis. Some studies have further integrated deep learning techniques with IoT to enhance predictive capabilities. While these approaches successfully enable real-time monitoring, they are predominantly limited to water quality analysis and do not address groundwater level prediction or incorporate spatial intelligence. As a result, their ability to provide comprehensive groundwater assessment remains limited.

2.2.2 DEEP LEARNING MODELS FOR GROUNDWATER LEVEL PREDICTION

Where models such as Long Short-Term Memory (LSTM) networks have been widely used. These models are particularly effective in capturing temporal dependencies in groundwater time-series data and have demonstrated superior performance compared to traditional statistical methods. Several studies have also explored multi-site deep learning frameworks for predicting groundwater levels across different regions. However, these approaches are generally based on historical datasets and lack integration with real-time IoT data. Moreover, they do not consider groundwater quality parameters or spatial variability, which limits their applicability in dynamic real-world scenarios.

2.2.3 SPATIAL AND GEOSPATIAL INTELLIGENCE IN GROUNDWATER ANALYSIS

In this context, researchers have utilized machine learning models in combination with geospatial data to improve groundwater quality prediction. By incorporating spatial attributes such as location, land use, and geological characteristics, these methods enhance prediction accuracy and provide better regional insights. Additionally, wireless sensor networks integrated with geospatial technologies have been explored for distributed groundwater monitoring. Despite their advantages, these approaches are largely confined to offline analysis and do not support real-time data processing or deep learning-based predictive modeling.

2.2.4 MACHINE LEARNING AND GIS-BASED GROUNDWATER QUALITY PREDICTION SYSTEMS

These studies leverage traditional machine learning algorithms along with GIS tools to analyze and visualize groundwater quality patterns. Web-based data analytics platforms have also been developed to support groundwater forecasting and decision-making. While these systems provide useful visualization and analytical capabilities, they often rely on simpler models and lack the advanced learning capabilities of deep learning techniques. Furthermore, they are typically designed for offline datasets and do not incorporate real-time IoT-based data acquisition.

2.2.5 INTEGRATED IOT–MACHINE LEARNING FRAMEWORKS AND SYSTEM-LEVEL REVIEWS

Which attempt to provide a holistic view of water monitoring systems. These works propose generalized architectures combining IoT and machine learning for environmental monitoring applications. Although they offer valuable conceptual insights, many of these frameworks lack detailed implementation and validation, particularly in groundwater-specific contexts. They also do not fully integrate spatial intelligence and advanced deep learning techniques within a real-time operational system.

From the above analysis, it is evident that existing research efforts tend to address groundwater level prediction, water quality monitoring, or spatial analysis independently. While IoT technologies enable real-time data collection and deep learning models improve predictive accuracy, there is a lack of integrated systems that combine these components into a unified framework. Moreover, the absence of spatial intelligence and real-time predictive capabilities in most existing studies highlights a significant research gap. This study aims to address these limitations by developing a comprehensive real-time IoT-based spatio-temporal deep learning framework for simultaneous prediction of groundwater level and quality.

2.3 IDENTIFIED RESEARCH GAPS

From the reviewed literature, it is evident that most existing studies address groundwater level prediction and water quality monitoring as separate problems. While IoT-based systems enable real-time data acquisition and deep learning models improve prediction accuracy, their integration into a unified framework remains limited.

Furthermore, many approaches rely on historical or offline datasets and lack the capability to handle continuous real-time data streams. The incorporation of spatial intelligence is also minimal, despite its significant influence on groundwater behavior across different locations. In addition, existing systems often do not include advanced features such as ensemble modeling, anomaly detection, and real-time alert mechanisms.

Therefore, there is a clear need for an integrated, real-time system that combines IoT-based sensing, spatial intelligence, and advanced deep learning techniques to simultaneously monitor and predict groundwater level and quality. This research addresses these gaps by developing a comprehensive spatio-temporal deep learning framework capable of supporting accurate prediction and informed decision-making.

Table 2.1 Literature Survey

Sl. No	Title	Core Methodology	Data/Scope	Key Contribution	Identified Gap
[1]	A deep learning–IoT integrated framework for real-time groundwater quality monitoring and prediction in urban aquifers (2024)	IoT sensors + Deep Learning	Urban groundwater quality	End-to-end IoT–DL framework for real-time quality monitoring	Focused only on quality, no groundwater level prediction or spatial intelligence
[2]	Multi-site deep learning for groundwater level prediction across global datasets (2024)	LSTM-based DL models	Multi-regional groundwater level data	Demonstrates scalability of DL for groundwater level forecasting	No IoT, no real-time deployment, no quality parameters
[3]	Prediction of groundwater levels using a long short-term memory (LSTM) technique (2023)	LSTM time-series modeling	Historical groundwater levels	Establishes LSTM as a strong baseline for GWL prediction	Lacks spatial features and real-time sensing

[4]	Groundwater quality prediction and analysis using machine learning models and geospatial technology (2023)	ML + GIS	Regional groundwater quality	Shows effectiveness of geospatial features in quality assessment	Not integrated with IoT or deep learning
[5]	Large-scale prediction of groundwater nitrate concentrations from spatial data using machine learning (2024)	Spatial ML models	Nitrate concentration datasets	Highlights importance of spatial data in groundwater quality	Limited to single contaminant, no real-time framework
[6]	Wireless sensor network technology and geospatial technology for groundwater quality monitoring (2022)	WSN + GIS	Distributed sensing	Demonstrates sensor-based spatial groundwater monitoring	No prediction models; monitoring only
[7]	Development of a low-cost IoT system for monitoring piezometric level and temperature of groundwater (2023)	Low-cost IoT hardware	Groundwater level & temperature	Validates feasibility of real-time sensing	No ML/DL prediction or analytics layer

[8]	An IoT real-time potable water quality monitoring and prediction model based on cloud computing (2023)	IoT + ML + Cloud	Water quality parameters	Cloud-centric IoT-ML architecture	Not groundwater-specific; lacks spatial intelligence
[9]	Analysis and prediction of water quality using LSTM deep neural networks in IoT environment (2023)	LSTM + IoT	Time-series water quality data	Confirms LSTM suitability for IoT data streams	Does not address groundwater or spatial variation
[10]	Web-based data analytics framework for well forecasting and groundwater quality (2022)	Web analytics + ML	Well-based datasets	Integrates analytics and visualization	No deep learning or real-time IoT sensing
[11]	Toward design of IoT and ML-enabled frameworks for analysis and prediction of water quality (2024)	IoT + ML framework	General water systems	Strong conceptual framework	Mostly conceptual; lacks implementation depth
[12]	Evaluation and prediction of groundwater quality using ML	ML (SVM, ANFIS) + GIS	Irrigation groundwater quality	Shows ML + GIS effectiveness	Offline analysis; no IoT or deep learning

	models and GIS approaches (2023)				
[13]	Groundwater quality prediction and assessment using machine learning and spatial data (2024)	ML + spatial features	Regional groundwater datasets	Reinforces importance of spatial features	No real-time sensing or DL-based architecture

2.4 CONCLUSION

This chapter presented a comprehensive review of existing research on groundwater monitoring and prediction, covering IoT-based systems, deep learning approaches, and spatial analysis techniques. The review highlighted that, although significant advancements have been made in individual areas such as real-time monitoring and predictive modeling, most existing studies lack an integrated approach that combines these components effectively.

The analysis also identified key limitations, including the absence of real-time data integration, limited use of spatial intelligence, and lack of advanced predictive frameworks. Based on these observations, a clear research gap has been established, emphasizing the need for a unified system that integrates IoT, spatial features, and deep learning for accurate and real-time groundwater prediction. The next chapter presents the proposed system developed to address these challenges.

CHAPTER 3
THEORETICAL BASIS AND CONCEPTUAL STRUCTURE

3.1 INTRODUCTION

This chapter presents the theoretical foundation and conceptual structure of the proposed real-time groundwater monitoring and prediction system. The study integrates principles from Internet of Things (IoT), time-series analysis, deep learning, and spatial intelligence to develop an intelligent framework for groundwater level and quality prediction. The theoretical basis explains the underlying concepts and models used in the system, while the conceptual structure describes how these components are integrated into a unified architecture.

3.2 THEORETICAL BASIS

The proposed system is built upon multiple theoretical concepts that collectively enable real-time monitoring and accurate prediction of groundwater behavior. These include IoT-based sensing, time-series modeling, deep learning techniques, and spatial data analysis.

IoT technology forms the foundation for real-time data acquisition by enabling continuous monitoring of environmental parameters through sensor networks. The use of distributed sensors allows for the collection of groundwater level and quality parameters at regular intervals, thereby providing high-resolution temporal data. This continuous data stream is essential for capturing dynamic variations in groundwater conditions.

Groundwater behavior is inherently temporal in nature, influenced by factors such as rainfall, seasonal variations, and human activities. Time-series analysis plays a crucial role in understanding these temporal patterns and trends. Traditional statistical methods are often limited in capturing nonlinear dependencies, which has led to the adoption of deep learning approaches.

Among deep learning models, Long Short-Term Memory (LSTM) networks are widely used for time-series prediction due to their ability to learn long-term dependencies. LSTM models overcome the limitations of conventional recurrent neural

networks by incorporating memory cells and gating mechanisms, which enable them to retain relevant information over extended time periods. In addition, Convolutional Neural Network-based LSTM (CNN-LSTM) models combine spatial feature extraction with temporal modeling, making them suitable for spatio-temporal data analysis.

Another important theoretical component is ensemble learning, which combines multiple models to improve prediction accuracy and robustness. By aggregating the outputs of different models, ensemble techniques reduce the impact of individual model errors and enhance overall performance. Anomaly detection methods are also incorporated to identify abnormal patterns or sudden changes in groundwater conditions, which are critical for early warning systems.

Spatial intelligence is an essential aspect of groundwater analysis, as groundwater characteristics vary significantly across locations. The integration of geographical features such as latitude, longitude, and location-based attributes enables the model to capture spatial variability. This combination of temporal and spatial data forms the basis of spatio-temporal modeling, which improves prediction accuracy and generalization.

3.3 CONCEPTUAL STRUCTURE OF THE PROPOSED SYSTEM

The conceptual structure of the proposed system is designed as a multi-layer framework that integrates data acquisition, processing, analysis, and visualization. The system begins with the sensing layer, where IoT sensors continuously measure groundwater parameters such as water level, pH, total dissolved solids, electrical conductivity, turbidity, and temperature.

The collected data is processed through an edge/control layer, which performs signal conditioning, noise reduction, and analog-to-digital conversion. This layer ensures that the raw sensor data is transformed into a structured and usable format before transmission. The communication layer then facilitates secure and reliable data transfer to the cloud using wireless communication technologies.

In the cloud and storage layer, the incoming data is stored in a time-stamped format, allowing both real-time and historical analysis. The preprocessing layer further refines the data by performing operations such as synchronization, noise filtering,

missing value handling, and temporal windowing. These steps are essential to ensure data quality and consistency.

The spatial intelligence layer integrates geographical information into the dataset by mapping location-based attributes and performing feature engineering. This enables the system to account for spatial variations in groundwater conditions. The processed spatio-temporal data is then fed into the model building and prediction layer, where deep learning models are trained and optimized.

Finally, the application layer provides user interaction through a web-based dashboard. It visualizes groundwater trends, prediction results, and system status using graphical representations. The system also includes an alert mechanism that generates notifications when abnormal conditions are detected.

3.4 OVERALL FRAMEWORK

The overall framework of the proposed system integrates IoT, cloud computing, and deep learning into a cohesive pipeline. The workflow begins with real-time data acquisition, followed by edge-level processing and secure communication. The data is then stored and preprocessed in the cloud environment, where spatial features are incorporated. The processed data is used for training and prediction using deep learning models, and the results are displayed through an interactive dashboard. This framework ensures continuous monitoring, accurate prediction, and timely alerts, making it suitable for real-world groundwater management applications.

3.5 CONCLUSION

This chapter discussed the theoretical concepts and conceptual structure underlying the proposed groundwater monitoring and prediction system. The integration of IoT, time-series analysis, deep learning, and spatial intelligence provides a strong foundation for developing an intelligent and scalable solution. The conceptual framework presented in this chapter serves as the basis for the detailed system architecture and implementation discussed in the subsequent chapters.

CHAPTER 4
METHODOLOGY

4.1 INTRODUCTION

This chapter describes the methodology adopted for the development of the proposed real-time IoT-based spatio-temporal deep learning framework for groundwater level and quality prediction. The methodology outlines the overall workflow of the system, including data acquisition, preprocessing, spatial feature integration, model development, and result visualization. It also explains how different system components are integrated to ensure continuous monitoring and accurate prediction.

4.2 OVERALL METHODOLOGY

The proposed methodology follows a structured approach that begins with real-time data acquisition and progresses through multiple stages of processing and analysis. Groundwater parameters such as water level, pH, total dissolved solids (TDS), electrical conductivity, turbidity, and temperature are continuously collected using IoT sensors deployed at monitoring locations. These sensors generate time-stamped data streams that reflect real-time groundwater conditions.

The collected data is processed at the edge layer, where signal conditioning and analog-to-digital conversion are performed using microcontroller units. This ensures that the raw sensor data is converted into a usable digital format before transmission. The processed data is then transmitted securely through communication networks to a cloud-based storage system.

In the cloud environment, the data undergoes preprocessing to improve its quality and consistency. This includes handling missing values, filtering noise, removing outliers, and performing temporal windowing. These steps are essential for preparing the data for predictive modeling.

Spatial intelligence is incorporated by integrating geographical attributes such as latitude, longitude, and location-based features. This enables the system to capture

spatial variations in groundwater behavior. The processed spatio-temporal data is then used to train deep learning models for prediction.

The final stage of the methodology involves visualization and alert generation. The prediction results are displayed through a web-based dashboard, and alerts are generated when abnormal conditions are detected. This ensures that users can monitor groundwater conditions in real time and take appropriate actions.

4.3 DATA ACQUISITION AND PREPROCESSING

Data acquisition is performed using IoT sensors that continuously monitor groundwater level and quality parameters. The sensors are designed to capture key environmental variables, including pH, TDS, electrical conductivity, turbidity, and temperature. Each sensor reading is time-stamped and transmitted at regular intervals, enabling continuous monitoring of groundwater conditions. The use of IoT technology allows for automated data collection, reducing dependency on manual measurements and improving data availability. This real-time data stream forms the foundation for subsequent analysis and prediction.

Data preprocessing is a critical step in the methodology, as it ensures that the input data is clean, consistent, and suitable for modeling. The preprocessing pipeline includes several operations, such as noise filtering, missing value handling, and outlier removal. These steps help eliminate inconsistencies and improve data reliability. Temporal windowing is also applied to structure the data into sequences suitable for time-series modeling. This allows the model to learn temporal dependencies and patterns in groundwater behavior. Normalization techniques are used to scale the data, ensuring stable and efficient model training.

4.4 SPATIAL FEATURE INTEGRATION

Spatial feature integration enhances the predictive capability of the system by incorporating geographical information into the dataset. Features such as latitude, longitude, and location-based attributes are used to represent spatial variations in groundwater conditions.

By combining spatial and temporal data, the system is able to perform spatio-temporal modeling, which improves prediction accuracy and generalization across different locations. This step is particularly important in regions where groundwater characteristics vary significantly from one area to another.

4.5 MODEL DEVELOPMENT

The model development stage involves the implementation of deep learning models for groundwater prediction. Long Short-Term Memory (LSTM) networks are used to capture temporal dependencies in the data, while CNN-LSTM models combine convolutional feature extraction with temporal modeling.

In addition to individual models, ensemble techniques are employed to improve prediction accuracy by combining multiple model outputs. Anomaly detection mechanisms are also integrated to identify unusual patterns in groundwater conditions, enabling early warning of potential issues.Model training is performed using processed spatio-temporal data, and hyperparameter tuning is applied to optimize performance. The trained models are then used to generate predictions for groundwater level and quality parameters.

4.6 VISUALIZATION AND ALERT SYSTEM

The final stage of the methodology focuses on presenting the prediction results and enabling user interaction. A web-based dashboard is developed to visualize groundwater trends, prediction outputs, and system status through graphs and charts. An alert system is implemented to notify users when groundwater parameters exceed predefined thresholds or when anomalies are detected. This feature enhances the practical applicability of the system by supporting timely decision-making and risk management.

4.7 CONCLUSION

This chapter described the methodology used to develop the proposed groundwater monitoring and prediction system. The integration of IoT-based data acquisition, advanced preprocessing techniques, spatial intelligence, and deep learning models provides a comprehensive approach for real-time groundwater analysis.

CHAPTER 5

SYSTEM ARCHITECTURE, MODULE DESIGN AND ALGORITHMS

5.1 OVERVIEW

The proposed system is designed as a multi-layer architecture that integrates IoT-based sensing, cloud computing, and deep learning techniques to enable real-time groundwater monitoring and prediction. The architecture is structured into eight major layers, namely the sensing layer, edge/control layer, communication layer, cloud and storage layer, data preprocessing layer, spatial intelligence layer, model building and prediction layer, and application layer. Each layer performs a specific function and collectively contributes to the end-to-end operation of the system.

The overall design ensures a seamless flow of data from acquisition to prediction and visualization. By combining real-time data collection with advanced analytical techniques, the system provides a comprehensive solution for monitoring groundwater level and quality under dynamic environmental conditions.

5.2 SYSTEM ARCHITECTURE DESCRIPTION

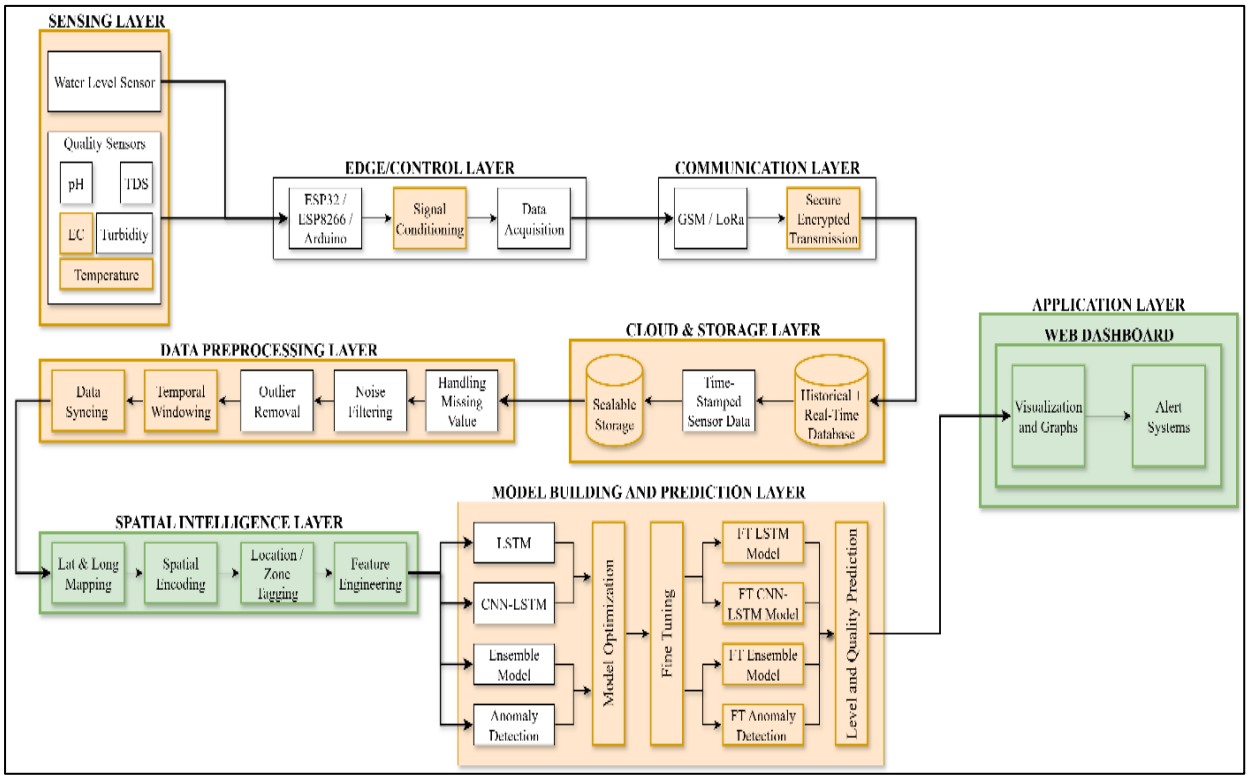

Figure 5.1 Detailed System Architecture

The sensing layer forms the foundation of the system by collecting groundwater level and quality parameters using IoT sensors. These sensors continuously monitor key environmental variables such as water level, pH, total dissolved solids (TDS), electrical conductivity, turbidity, and temperature. The collected data represents real-time groundwater conditions and serves as the primary input to the system.

The edge/control layer is responsible for processing the raw sensor signals. It performs signal conditioning, noise reduction, and analog-to-digital conversion using microcontroller units. This layer ensures that the sensor data is converted into a structured digital format suitable for transmission and further processing.

The communication layer enables secure and reliable transmission of data from the sensing units to the cloud infrastructure. Wireless communication technologies such as GSM or LoRa are used to transfer data over long distances. Security mechanisms, including encryption and authentication, are implemented to ensure data integrity and confidentiality.

The cloud and storage layer manages the storage of both real-time and historical data. The incoming sensor data is stored in a time-stamped format, allowing efficient retrieval and analysis. This layer provides scalability and supports continuous data flow required for real-time applications.

The data preprocessing layer plays a critical role in improving data quality. It performs operations such as noise filtering, missing value handling, outlier removal, normalization, and temporal windowing. These preprocessing steps ensure that the data is clean, consistent, and suitable for predictive modeling.

The spatial intelligence layer incorporates geographical information into the dataset. It integrates features such as latitude, longitude, and location-based attributes, enabling the system to capture spatial variations in groundwater conditions. This enhances the predictive capability of the model by providing contextual information.

The model building and prediction layer implements advanced deep learning techniques for forecasting groundwater level and quality. Models such as LSTM and CNN-LSTM are used to capture temporal and spatio-temporal patterns in the data. Ensemble methods and anomaly detection techniques are also incorporated to improve prediction accuracy and identify abnormal conditions.

Finally, the application layer provides user interaction through a web-based dashboard. It visualizes groundwater trends, prediction results, and system status using graphical representations. Additionally, it generates alerts when groundwater parameters exceed predefined thresholds, enabling timely decision-making.

5.3 MODULE DESCRIPTION

The system is further organized into functional modules corresponding to each architectural layer. The sensing module is responsible for acquiring raw data from IoT sensors and ensuring continuous monitoring of groundwater parameters. The edge module processes the raw signals by performing conditioning and conversion into digital format, enabling efficient data handling.

The communication module ensures secure transmission of data using wireless technologies, incorporating encryption and authentication mechanisms to maintain data security. The storage module manages both real-time and historical datasets, ensuring proper organization and accessibility of data.

The preprocessing module prepares the data for analysis by removing noise, handling missing values, and structuring the data into appropriate formats. The spatial module enhances the dataset by incorporating location-based features, enabling spatially aware prediction.

The model module is responsible for training and deploying deep learning models for prediction. It utilizes techniques such as LSTM, CNN-LSTM, and ensemble learning to generate accurate forecasts. The application module provides visualization and alert functionalities, allowing users to monitor groundwater conditions and respond to critical situations.

5.3.1 SENSING LAYER

The sensing layer serves as the primary interface between the physical groundwater environment and the digital system. It is responsible for continuous acquisition of groundwater parameters using IoT-enabled sensors deployed at monitoring locations. The parameters measured include groundwater level, pH, total dissolved solids (TDS), electrical conductivity (EC), turbidity, and temperature. These sensors operate in real time and generate high-frequency, time-stamped data streams

that reflect dynamic environmental conditions. The reliability and accuracy of this layer are critical, as it directly influences the quality of downstream processing and prediction. The sensing module is designed to support scalability and adaptability, allowing additional sensors or parameters to be incorporated as required.

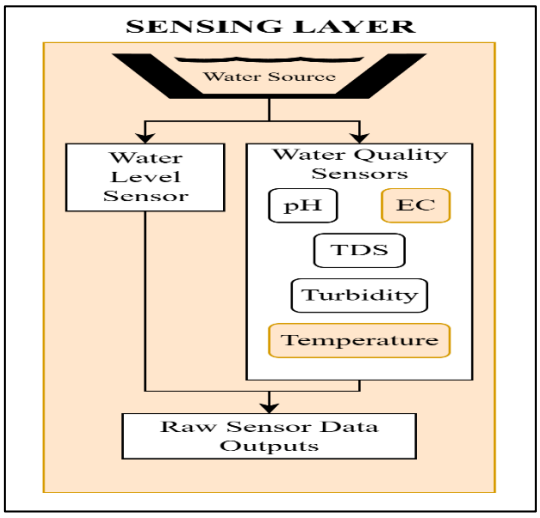

Figure 5.2 Sensing Layer

5.3.2 EDGE LAYER

The edge layer performs initial processing of the raw analog signals obtained from the sensing layer. This includes signal amplification, noise suppression, and level shifting to ensure signal stability and integrity. The processed signals are then converted into digital format using Analog-to-Digital Conversion (ADC) techniques. By performing preprocessing at the edge, the system reduces data redundancy, minimizes transmission load, and improves overall efficiency. Additionally, buffering mechanisms are implemented to handle temporary storage and ensure reliable data transfer even in the presence of network fluctuations. This layer plays a crucial role in bridging the gap between physical sensing and digital communication. The use of edge processing reduces latency and minimizes bandwidth consumption, making the system suitable for real-time deployment in resource-constrained environments.

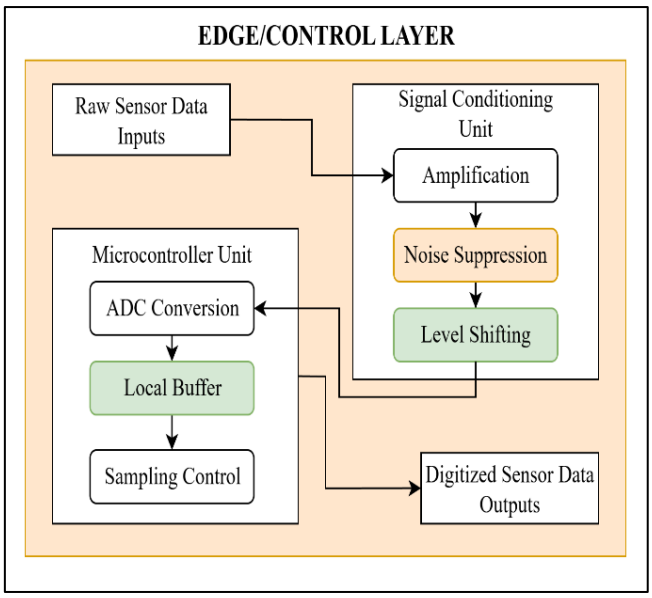

Figure 5.3 Edge Layer

5.3.3 COMMUNICATION LAYER

The communication layer is responsible for secure and reliable transmission of data from the edge devices to the cloud infrastructure. It utilizes wireless communication technologies such as GSM or LoRa depending on the deployment scenario and network availability. To ensure data confidentiality and integrity, encryption and authentication mechanisms are implemented before transmission. The data packets are structured in a standardized format to support interoperability and efficient routing. This layer is designed to handle real-time data flow while maintaining low latency and high reliability, which are essential for continuous monitoring systems.

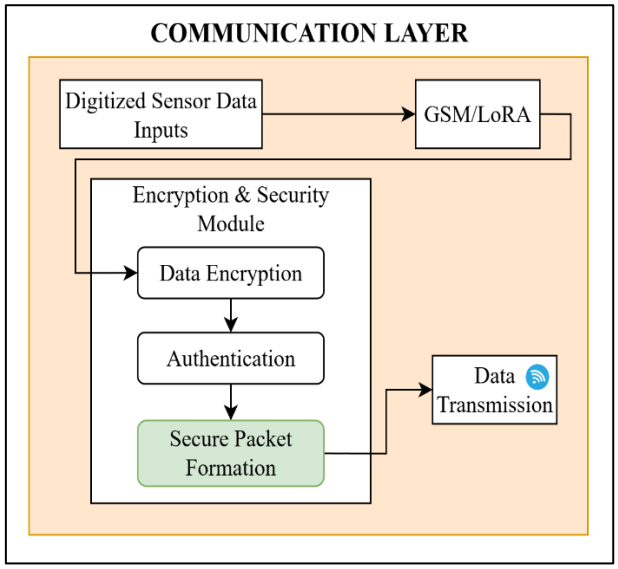

Figure 5.4 Communication Layer

5.3.4 STORAGE LAYER

The storage layer manages both real-time and historical data in a scalable cloud-based environment. Incoming data is time-stamped and stored in structured formats, enabling efficient retrieval and analysis. This layer supports large-scale data handling and ensures high availability, fault tolerance, and data persistence. By maintaining historical records, the system enables long-term trend analysis and model training. The use of cloud infrastructure allows dynamic scaling of storage resources based on data volume, making the system suitable for large deployments.

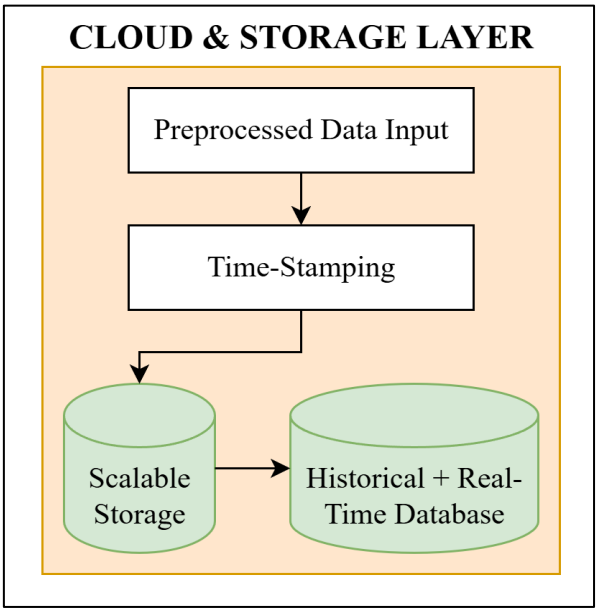

Figure 5.5 Storage Layer

5.3.5 PREPROCESSING LAYER

The preprocessing layer enhances the quality and consistency of the collected data before it is used for modeling. It performs multiple operations, including data synchronization, noise filtering, missing value imputation, and outlier detection and removal. Temporal windowing is applied to convert raw data streams into structured sequences suitable for time-series analysis. Additionally, normalization techniques are used to scale the data, ensuring stable and efficient model training. This layer is critical in eliminating inconsistencies and improving the reliability of the dataset, thereby significantly impacting prediction accuracy.

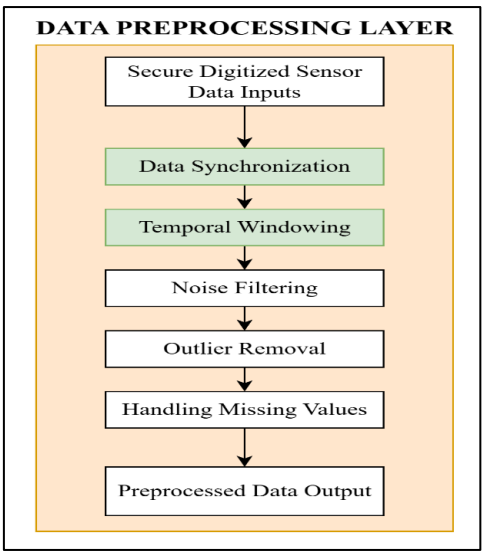

Figure 5.6 Preprocessing Layer

5.3.6 SPATIAL LAYER

The spatial layer incorporates geographical intelligence into the dataset by integrating location-based attributes such as latitude and longitude. It performs spatial encoding and zone tagging to represent regional characteristics and variations in groundwater conditions. Feature engineering techniques are applied to extract meaningful spatial features, which are then combined with temporal data to form a spatio-temporal dataset. This integration enables the system to capture location-specific patterns and improves the generalization capability of the predictive models across different regions.

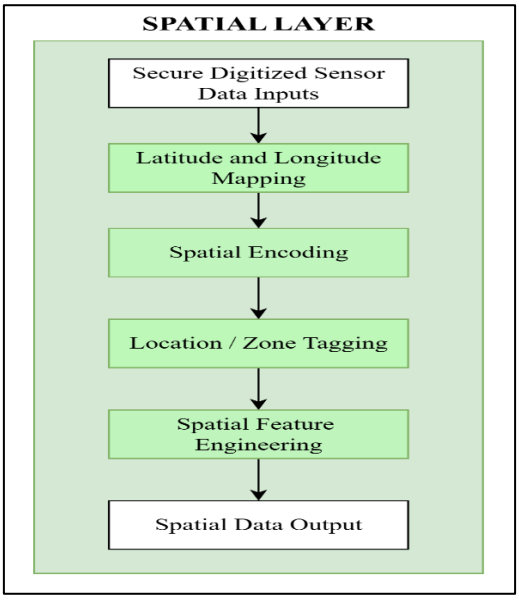

Figure 5.7 Spatial Layer

5.3.7 MODEL BUILDING LAYER

The model building layer is responsible for developing and deploying deep learning models for groundwater prediction. It utilizes advanced architectures such as Long Short-Term Memory (LSTM) networks for capturing temporal dependencies and CNN-LSTM models for extracting both spatial and temporal features. Ensemble learning techniques are employed to combine multiple model outputs, improving prediction robustness and accuracy. Additionally, anomaly detection mechanisms are integrated to identify abnormal patterns in groundwater conditions. Model optimization and fine-tuning are performed to enhance performance, ensuring reliable and accurate predictions in real-time scenarios. The selection of LSTM and CNN-LSTM models is motivated by their ability to capture long-term temporal dependencies and complex spatio-temporal correlations in groundwater data.

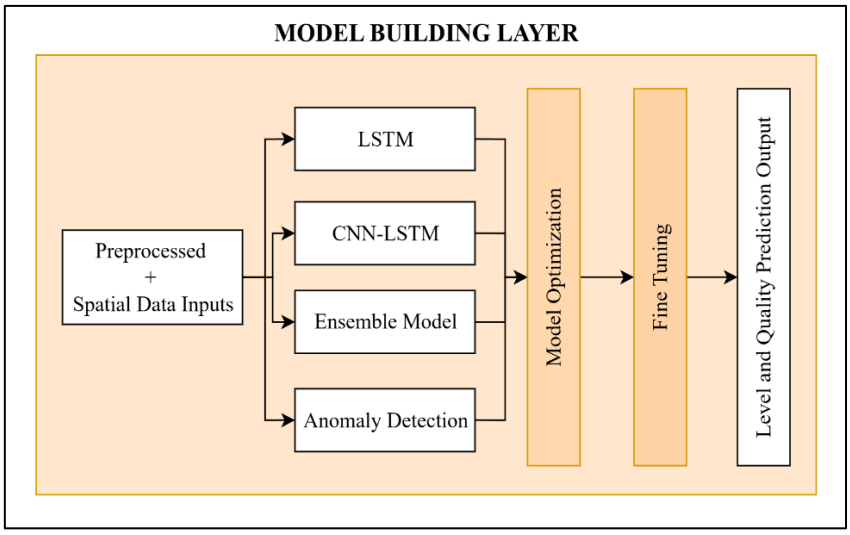

Figure 5.8 Model Building Layer

5.3.8 APPLICATION LAYER

The application layer provides an interactive interface for users through a web-based dashboard. It visualizes real-time groundwater data, prediction results, and system status using graphs, charts, and maps. This layer also includes an alert mechanism that generates notifications when groundwater parameters exceed predefined thresholds or when anomalies are detected. The dashboard is designed for usability and accessibility, enabling stakeholders to monitor groundwater conditions

and make informed decisions. This layer bridges the gap between complex analytical outputs and practical user interaction.

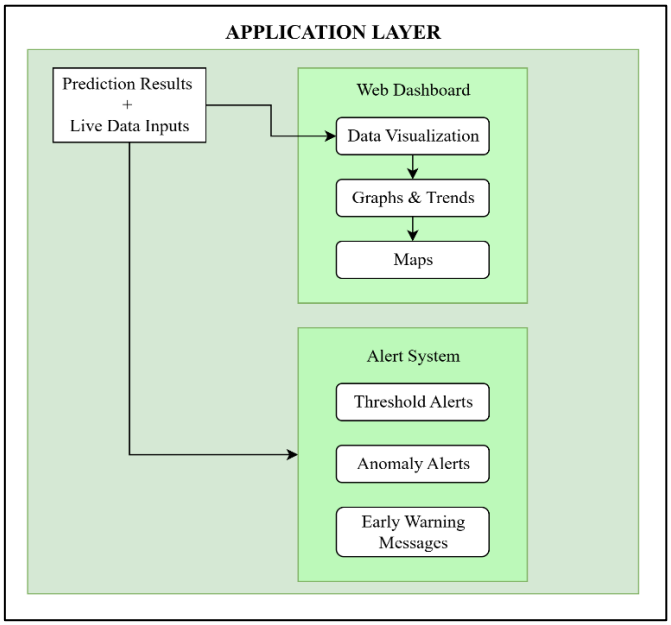

Figure 5.9 Application Layer

The interaction between modules follows a structured data pipeline, where the output of each layer serves as the input to the subsequent layer. Let S_t represent sensor data at time t. The processed data at each stage can be represented as:

$$E_t = f_edge(S_t)$$

$$C_t = f_comm(E_t)$$

$$D_t = f_storage(C_t)$$

$$P_t = f_preprocess(D_t)$$

$$X_t = f_spatial(P_t)$$

$$Y_t = f_model(X_t)$$

where Y_t represents the predicted groundwater parameters. This formulation ensures a well-defined transformation of data across layers and highlights the modular dependency within the system.

$$\hat{Y}_t = f(X_t, \theta)$$

5.4 ALGORITHMIC FRAMEWORK

The proposed system is governed by a comprehensive set of algorithms that define both the overall workflow and the functionality of individual modules. These algorithms ensure systematic data flow, efficient processing, and accurate prediction across all layers of the system. The framework follows an end-to-end pipeline that begins with sensor initialization and data acquisition, followed by edge processing, secure communication, cloud storage, preprocessing, spatial feature integration, and predictive modeling. Finally, the results are visualized and alerts are generated based on predefined conditions. This structured algorithmic design ensures robustness, scalability, and real-time responsiveness of the system.

At the sensing stage, the algorithm initializes the sensors and continuously captures groundwater parameters at regular intervals. The edge processing algorithm performs signal conditioning and converts analog signals into digital data. The communication algorithm securely transmits the processed data to the cloud using appropriate protocols.

The storage algorithm organizes and stores the incoming data in a structured format with time stamps. The preprocessing algorithm cleans and transforms the data, ensuring its suitability for modeling. The spatial algorithm integrates geographical features and performs feature engineering to enhance the dataset.

The model algorithm trains and evaluates deep learning models using the processed data, generating predictions for groundwater level and quality. Finally, the application algorithm visualizes the results and triggers alerts when abnormal conditions are detected.

These algorithms collectively ensure systematic execution of the entire framework, enabling efficient data flow, accurate prediction, and real-time monitoring. The algorithmic framework is designed to be robust against missing data, communication delays, and sensor noise through integrated preprocessing, buffering, and anomaly detection mechanisms.

5.4.1 END TO END FRAMEWORK

The end-to-end algorithm represents the complete operational pipeline of the system. It initializes all system components, including sensors, communication modules, and machine learning models. The algorithm continuously acquires sensor data, processes it through various stages, and generates predictions in real time. It also incorporates anomaly detection and threshold-based alert mechanisms. The iterative nature of the algorithm ensures continuous monitoring and dynamic updating of results, making it suitable for real-time groundwater management applications.

Algorithm 1 End-to-End Smart Groundwater Monitoring and Prediction Framework

Require: Sensor Streams $S = \{level, pH, TDS, EC, turbidity, temperature\}$
Ensure: Real-time Level and Quality Prediction + Alerts

```
Initialize Edge Controller (ESP32/ESP8266/Arduino)
Initialize Secure Communication (GSM/LoRa + Encryption)
Initialize Cloud Storage and Historical Database
Initialize ML Models (LSTM, CNN-LSTM, Ensemble, Anomaly Detector)
while system is active do
    Acquire raw sensor data R_t
    Perform signal conditioning on R_t
    Digitize and package data packet P_t
    Encrypt P_t
    Transmit P_t to Cloud
    Store time-stamped data in scalable storage
    Handle missing values
    Apply noise filtering
    Remove outliers
    Apply temporal windowing
    Synchronize multi-sensor data
    Perform spatial mapping and encoding
    Apply feature engineering
    Generate predictions using:
        LSTM
        CNN-LSTM
        Ensemble model
        Anomaly detection
    Perform model optimization and fine-tuning
    Output groundwater level and quality prediction
    if anomaly detected OR threshold exceeded then
      Trigger alert system
    end if
    Update dashboard visualization
end while
```

Figure 5.10 End-to-End Framework Algorithm

5.4.2 ALGORITHM OF SENSING LAYER

The sensing algorithm initializes all sensors and continuously collects groundwater parameters at predefined intervals. It ensures synchronized data acquisition from multiple sensors and aggregates the readings into a unified raw data vector. This algorithm is designed to operate efficiently under continuous conditions, ensuring minimal data loss and consistent sampling.

Algorithm 2 Sensing Layer Data Acquisition

Require: Water source
Ensure: Raw sensor vector R_t

```
Initialize sensors:
    LevelSensor
    QualitySensors = {pH, EC, TDS, Turbidity, Temperature}
while system active do
  L_t ← Read(LevelSensor)
  for each sensor s in QualitySensors do
    Q_t[s] ← Read(s)
  end for
  R_t ← [L_t, Q_t]
  Output R_t
end while
```

Figure 5.11 Sensing Layer Algorithm

5.4.3 ALGORITHM OF EDGE LAYER

The edge algorithm processes raw sensor signals through amplification, noise suppression, and level shifting operations. It then converts the conditioned signals into digital format using ADC. Buffering and sampling mechanisms are implemented to ensure reliable data handling and timely transmission. This algorithm reduces noise and improves signal quality before further processing.

Algorithm 3 Edge Signal Conditioning and Digitization

Require: Raw sensor signal R_t
Ensure: Digitized data packet D_t

```
A_t ← Amplify(R_t)
F_t ← NoiseSuppress(A_t)
S_t ← LevelShift(F_t)
D_t ← ADC_Convert(S_t)
BufferStore(D_t)
if SamplingTimeReached() then
    TransmitToCommunication(D_t)
end if
```

Figure 5.12 Edge Layer Algorithm

5.4.4 ALGORITHM OF COMMUNICATION LAYER

The communication algorithm encrypts the processed data using secure keys and performs authentication to ensure data integrity. It then forms structured data packets and transmits them using appropriate communication protocols such as GSM or LoRa.

The algorithm dynamically selects transmission modes based on network availability, ensuring reliable communication.

Algorithm 4 Secure Data Communication

Require: Digitized data D_t

Ensure: Secure transmitted packet P_t

```
E_t ← Encrypt(D_t, Key)
Auth_t ← Authenticate(E_t)
P_t ← FormSecurePacket(Auth_t)
if showing GSM then
    SendViaGSM(P_t)
else
    SendViaLoRa(P_t)
end if
```

Figure 5.13 Communication Layer Algorithm

5.4.5 ALGORITHM OF STORAGE LAYER

The storage algorithm decrypts incoming data, generates timestamps, and stores the data in a structured format within the cloud database. It ensures efficient indexing and retrieval of both real-time and historical data. This algorithm supports scalability and maintains data consistency across the system.

Algorithm 5 Cloud Storage and Time-Stamp Management

Require: Secure packet P_t

Ensure: Stored historical and real-time record

```
D_t ← Decrypt(P_t)
T_t ← GenerateTimestamp()
R_t ← AttachTimestamp(D_t, T_t)
StoreToScalableStorage(R_t)
UpdateHistoricalDatabase(R_t)
```

Figure 5.14 Storage Layer Algorithm

5.4.6 ALGORITHM OF PREPROCESSING LAYER

The preprocessing algorithm performs data cleaning operations, including synchronization, noise filtering, outlier removal, and missing value handling. It also

applies temporal windowing to structure the data for time-series modeling. This algorithm ensures that the dataset is accurate, consistent, and ready for model training.

Algorithm 6 Sensor Data Preprocessing

Require: Secure digitized data stream X

Ensure: Cleaned dataset X_c

1: $X_1 \leftarrow \text{SynchronizeSensors}(X)$
2: $X_2 \leftarrow \text{TemporalWindow}(X_1, \text{window_size})$
3: $X_3 \leftarrow \text{NoiseFilter}(X_2)$
4: $X_4 \leftarrow \text{RemoveOutliers}(X_3)$
5: $X_c \leftarrow \text{HandleMissingValues}(X_4)$
6: **return** X_c

Figure 5.15 Preprocessing Layer Algorithm

5.4.7 ALGORITHM OF SPATIAL LAYER

The spatial algorithm maps geographical coordinates and performs spatial encoding and zone tagging. It extracts spatial features and integrates them with preprocessed data to form a spatio-temporal dataset. This enhances the model's ability to capture location-specific patterns.

Algorithm 7 Spatial Feature Engineering

Require: Preprocessed data X_c, Location (lat, lon)

Ensure: Spatial feature matrix S_f

1: $M \leftarrow \text{MapCoordinates}(\text{lat}, \text{lon})$
2: $E \leftarrow \text{SpatialEncode}(M)$
3: $Z \leftarrow \text{ZoneTag}(E)$
4: $S_f \leftarrow \text{ExtractSpatialFeatures}(Z, X_c)$
5: **return** S_f

Figure 5.16 Spatial Layer Algorithm

5.4.8 ALGORITHM OF MODEL BUILDING LAYER

The model algorithm splits the dataset into training and testing sets and trains multiple deep learning models, including LSTM and CNN-LSTM. It also implements ensemble techniques and anomaly detection mechanisms. Model optimization and fine-tuning are performed to achieve high prediction accuracy. The best-performing model is selected for generating final predictions.

Algorithm 8 Model Training and Prediction Framework

Require: Preprocessed + Spatial features F

Ensure: Level and Quality Prediction Y_t

1: Split F into Train and Test
2: $M_1 \leftarrow$ TrainLSTM(Train)
3: $M_2 \leftarrow$ TrainCNNLSTM(Train)
4: $M_3 \leftarrow$ TrainEnsemble(Train)
5: $M_4 \leftarrow$ TrainAnomalyDetector(Train)
6: Optimize(M_1, M_2, M_3, M_4)
7: FineTune(M_1, M_2, M_3, M_4)
8: $Y_t \leftarrow$ PredictUsingBestModel(Test)
9: **return** Y_t

Figure 5.17 Model Building Layer Algorithm

5.4.9 ALGORITHM OF APPLICATION LAYER

The application algorithm visualizes prediction results and live data through an interactive dashboard. It continuously monitors system outputs and triggers alerts when anomalies are detected or thresholds are exceeded. Additionally, it sends early warning notifications to users, enabling proactive decision-making.

Algorithm 9 Dashboard Visualization and Alert System

Require: Prediction output Y_t, Live data D_t

Ensure: Visualization and alerts

```
DisplayGraphs(Y_t, D_t)
UpdateMaps(Y_t)
if ThresholdExceeded(Y_t) then
    TriggerThresholdAlert()
end if
if AnomalyDetected(Y_t) then
    TriggerAnomalyAlert()
end if
SendEarlyWarningMessages()
```

Figure 5.18 Application Layer Algorithm

5.4.10 COMPUTATIONAL COMPLEXITY ANALYSIS

The computational complexity of the proposed framework is primarily influenced by preprocessing and model training stages. The preprocessing operations such as filtering and normalization operate in $O(n)$ time, where n is the number of data points. The LSTM model training has a complexity of $O(n \times t \times d)$, where t represents the sequence length and d represents the number of features. The CNN-LSTM model introduces additional convolutional operations, increasing the complexity to $O(n \times t \times d \times k)$, where k denotes the number of filters. Despite the computational overhead during training, inference is performed in near real-time, making the system suitable for continuous monitoring applications.

5.5 CONCLUSION

This chapter presented the detailed system architecture, module design, and algorithmic framework of the proposed groundwater monitoring and prediction system. The multi-layer architecture ensures seamless integration of IoT, cloud computing, and deep learning components, while the modular design enhances scalability and flexibility. The algorithms provide a structured workflow for system operation, enabling reliable real-time monitoring and prediction. The next chapter discusses the implementation and experimental evaluation of the proposed system.

CHAPTER 6
IMPLEMENTATION

6.1 INTRODUCTION

This chapter describes the implementation of the proposed real-time IoT-based spatio-temporal deep learning framework for groundwater level and quality prediction. The implementation integrates hardware components, software tools, data processing techniques, and deep learning models into a unified system. It focuses on how the conceptual design and system architecture are translated into a functional solution capable of real-time monitoring, prediction, and visualization.

6.2 HARDWARE

The hardware implementation of the system is based on IoT sensing devices and microcontroller units. Sensors are used to measure groundwater parameters such as water level, pH, total dissolved solids (TDS), electrical conductivity, turbidity, and temperature. These sensors continuously capture environmental data at regular intervals.

A microcontroller unit, such as ESP32 or Arduino, is used to interface with the sensors and perform initial data processing. The microcontroller handles signal conditioning, analog-to-digital conversion, and data buffering. It ensures that the sensor readings are converted into a structured digital format suitable for transmission. The hardware setup enables continuous and automated data acquisition, forming the foundation of the real-time monitoring system.

6.3 SOFTWARE

The software implementation is carried out using Python and relevant libraries for data processing and machine learning. The system utilizes libraries such as NumPy and Pandas for data handling, and TensorFlow or Keras for deep

learning model development. The software components are designed to handle data acquisition, preprocessing, model training, prediction, and visualization.

The backend of the system manages data storage and processing, while the frontend provides a user interface for visualization. A web-based dashboard is implemented to display real-time data and prediction results through graphs and charts. The integration of hardware and software ensures seamless data flow from sensing to visualization.

6.4 DATA GENERATION AND HANDLING

The system operates using a controlled real-time data generation mechanism that emulates groundwater sensor readings under varying environmental conditions. This approach enables continuous data flow and allows the system to be tested under dynamic scenarios. The generated data includes time-stamped values of groundwater level and quality parameters, which are stored in the cloud database for further processing.

The data handling process involves organizing the incoming data into structured formats, ensuring consistency and accessibility. Both real-time and historical data are maintained, enabling model training and validation. This continuous data pipeline supports the development of robust predictive models.

6.5 DATA PREPROCESSING IMPLEMENTATION

Data preprocessing is implemented as a dedicated pipeline to enhance data quality before model training. The preprocessing steps include noise filtering, missing value handling, outlier detection and removal, and normalization. These operations ensure that the data is clean and suitable for deep learning models.

Temporal windowing is applied to transform the data into sequences required for time-series prediction. This allows the model to learn temporal dependencies and patterns in groundwater behavior. The preprocessing pipeline plays a crucial role in improving model accuracy and stability.

6.6 SPATIAL FEATURE IMPLEMENTATION

Spatial features are incorporated into the dataset by assigning geographical attributes such as latitude, longitude, and location-based identifiers. These features are encoded and integrated with the temporal data to form a spatio-temporal dataset.

The inclusion of spatial intelligence allows the model to capture location-specific variations in groundwater conditions. This enhances the predictive capability of the system, particularly in regions with heterogeneous groundwater characteristics.

6.7 MODEL IMPLEMENTATION

The model implementation involves the development and training of deep learning models for groundwater prediction. Long Short-Term Memory (LSTM) networks are used to capture temporal dependencies in the data, while CNN-LSTM models combine convolutional layers with LSTM units to extract both spatial and temporal features.

In addition to individual models, ensemble techniques are implemented to improve prediction accuracy by combining outputs from multiple models. Anomaly detection mechanisms are also integrated to identify unusual patterns in the data, enabling early warning of abnormal groundwater conditions.

The models are trained using preprocessed spatio-temporal data, and hyperparameters are tuned to achieve optimal performance. The trained models are then deployed for real-time prediction.

6.8 VISUALIZATION AND ALERT SYSTEM IMPLEMENTATION

The visualization component is implemented using a web-based dashboard that displays real-time groundwater data and prediction results. The dashboard includes graphical representations such as line charts and trend plots, allowing users to easily interpret the data.

An alert system is integrated into the application to notify users when groundwater parameters exceed predefined thresholds or when anomalies are detected. This feature enhances the usability of the system by enabling timely intervention and decision-making.

6.9 SYSTEM INTEGRATION

The overall system integrates hardware, software, data processing, and machine learning components into a cohesive pipeline. Data flows from the sensing layer to the edge layer, followed by secure transmission to the cloud. The data is then preprocessed, enriched with spatial features, and used for model training and prediction. The results are visualized through the application layer, completing the end-to-end workflow.

This integration ensures continuous monitoring, accurate prediction, and real-time user interaction, making the system suitable for practical deployment.

6.10 CONCLUSION

This chapter presented the implementation details of the proposed groundwater monitoring and prediction system. The integration of IoT-based sensing, advanced preprocessing techniques, spatial intelligence, and deep learning models has resulted in a robust and scalable system. The implementation demonstrates the feasibility of the proposed framework in real-time scenarios. The next chapter presents the results and performance evaluation of the system.

CHAPTER 7

RESULTS AND DISCUSSION

7.1 DATA ACQUISITION RESULTS

The system successfully performs continuous data acquisition using IoT-based sensing mechanisms. Groundwater parameters such as water level, pH, total dissolved solids (TDS), electrical conductivity, turbidity, and temperature are collected as time-stamped data streams. The data reflects dynamic variations in groundwater conditions and forms the foundation for further analysis.

	A	B	C	D	E	F	G	H	I	J	K	L
1	well_id	block	village	lat	lon	timestamp	water_level	ph	ec	tds	turbidity	temperature
17992	49	Palladam	Veerapandi	11.0689	77.3519	31-03-2025	10.34402052	8.000694219	5906.837767	4000	49.91425304	27.81325545
17993	49	Palladam	Veerapandi	11.0689	77.3519	30-04-2025	8.788315974	8.044452764	5665.10082	3876.399763	45.97175991	26.11166327
17994	49	Palladam	Veerapandi	11.0689	77.3519	31-05-2025	8.177702636	8.098589691	5746.887084	3948.807053	42.6093987	25.04386632
17995	49	Palladam	Veerapandi	11.0689	77.3519	30-06-2025	7.341495373	8.202439982	5669.349567	3861.090238	50.8940051	24.96304611
17996	49	Palladam	Veerapandi	11.0689	77.3519	31-07-2025	6.374195311	7.938338961	5530.182923	3772.89721	61.91363561	24.50847455
17997	49	Palladam	Veerapandi	11.0689	77.3519	31-08-2025	7.010456059	7.918953551	5388.528655	3703.389606	45.27918035	25.56416855
17998	49	Palladam	Veerapandi	11.0689	77.3519	30-09-2025	6.776383333	7.702587221	5301.282645	3645.643826	36.63338333	26.07105961
17999	49	Palladam	Veerapandi	11.0689	77.3519	31-10-2025	8.314362008	7.779808888	5683.383505	3917.11408	39.59306003	28.90845332
18000	49	Palladam	Veerapandi	11.0689	77.3519	30-11-2025	11.49683203	8.090411302	5829.472677	4000	54.54362082	32.27684648
18001	49	Palladam	Veerapandi	11.0689	77.3519	31-12-2025	12.40935578	8.080218746	5798.880246	4000	60.81994221	32.80012842
18002	50	Pongalur	Thethanur	10.9153	77.2611	31-01-1996	32.49195565	8.056001842	3506.277642	2399.646205	43.18023271	31.27987127
18003	50	Pongalur	Thethanur	10.9153	77.2611	29-02-1996	32.77431815	8.350911028	3550.248011	2433.447776	28.86353191	31.56774997
18004	50	Pongalur	Thethanur	10.9153	77.2611	31-03-1996	29.99395627	7.769632733	3167.914803	2182.62276	25.29423794	27.11262268
18005	50	Pongalur	Thethanur	10.9153	77.2611	30-04-1996	30.34777865	8.089242864	3285.869916	2260.698341	30.01683379	26.89821772
18006	50	Pongalur	Thethanur	10.9153	77.2611	31-05-1996	27.86875423	7.954578702	3051.891541	2076.60765	41.79815281	24.37072999
18007	50	Pongalur	Thethanur	10.9153	77.2611	30-06-1996	27.01513951	8.102455949	3019.935945	2055.377418	24.20067602	23.6532771
18008	50	Pongalur	Thethanur	10.9153	77.2611	31-07-1996	26.24602664	8.097327125	3074.50253	2119.435522	25.1720581	23.65283146
18009	50	Pongalur	Thethanur	10.9153	77.2611	31-08-1996	26.976119	7.985856996	3103.653619	2118.388178	52.5185672	26.13926852
18010	50	Pongalur	Thethanur	10.9153	77.2611	30-09-1996	28.22382731	8.040579782	3344.195537	2287.007431	41.23930186	28.13729868

Figure 7.1 Real-Time Groundwater Data

The results indicate that the system is capable of generating consistent and continuous data streams, enabling real-time monitoring without manual intervention.

7.2 DATA PREPROCESSING RESULTS

The preprocessing pipeline effectively improves data quality by removing noise, handling missing values, and eliminating outliers. Temporal windowing structures the data into sequences suitable for time-series modeling, while normalization ensures stable model training.

	A	B	C	D	E	F	G	H	I	J	K	L
1071	2	Avinashi	Uppilipalayam	11.2028	77.175	28-02-2025	23.42028151	7.966523059	5843.94764	4000	46.8145151	29.80757501
1072	2	Avinashi	Uppilipalayam	11.2028	77.175	31-03-2025	22.904792	8.077670609	5841.722786	4000	43.38278621	28.34701231
1073	2	Avinashi	Uppilipalayam	11.2028	77.175	30-04-2025	21.90418234	8.119550607	5834.141449	4000	41.61722199	26.6170935
1074	2	Avinashi	Uppilipalayam	11.2028	77.175	31-05-2025	20.19275212	8.217190816	5823.687218	4000	43.57781655	25.34648052
1075	2	Avinashi	Uppilipalayam	11.2028	77.175	30-06-2025	18.97295465	8.183502872	5809.761654	3978.410556	43.46154927	24.80448589
1076	2	Avinashi	Uppilipalayam	11.2028	77.175	31-07-2025	18.02074348	8.111234312	5801.404549	3969.942787	43.34528199	25.1283901
1077	2	Avinashi	Uppilipalayam	11.2028	77.175	31-08-2025	17.92980081	7.971692461	5764.163247	3937.36339	44.77215272	25.93580049
1078	2	Avinashi	Uppilipalayam	11.2028	77.175	30-09-2025	18.47669142	7.844935166	5774.534941	3958.952835	48.52648314	27.4424062
1079	2	Avinashi	Uppilipalayam	11.2028	77.175	31-10-2025	19.57940198	7.796388182	5797.718717	3967.420604	49.25023553	28.82508909
1080	2	Avinashi	Uppilipalayam	11.2028	77.175	30-11-2025	21.31001936	7.932137639	5834.527966	4000	54.7337479	30.62249824
1081	2	Avinashi	Uppilipalayam	11.2028	77.175	31-12-2025	22.11543945	8.025112307	5851.391697	4000	55.19421896	31.38676304
1082	3	Avinashi	Karavalur	11.20778	77.19167	31-01-1996	25.2248252	8.463459505	2928.519322	2003.893801	22.56617655	31.16472014
1083	3	Avinashi	Karavalur	11.20778	77.19167	29-02-1996	24.69019935	8.378820052	2888.887116	1973.163863	24.36621631	30.12684106
1084	3	Avinashi	Karavalur	11.20778	77.19167	31-03-1996	23.72213163	8.464629012	2852.39225	1952.789297	26.16625606	28.33965116
1085	3	Avinashi	Karavalur	11.20778	77.19167	30-04-1996	22.30373965	8.405831611	2753.451915	1890.138151	27.62814028	26.76950274
1086	3	Avinashi	Karavalur	11.20778	77.19167	31-05-1996	21.19766474	8.488626006	2681.405556	1840.040099	28.75933447	25.79771249
1087	3	Avinashi	Karavalur	11.20778	77.19167	30-06-1996	20.53180975	8.395209548	2579.194295	1758.897198	27.2186093	24.7327968
1088	3	Avinashi	Karavalur	11.20778	77.19167	31-07-1996	20.16357062	8.411873309	2556.792694	1741.012056	32.19722492	25.16169609
1089	3	Avinashi	Karavalur	11.20778	77.19167	31-08-1996	20.47041241	8.436511966	2544.835063	1739.635038	31.32403631	26.34436558
1090	3	Avinashi	Karavalur	11.20778	77.19167	30-09-1996	20.9949753	8.441725046	2615.788729	1790.37094	37.46675956	28.15304508
1091	3	Avinashi	Karavalur	11.20778	77.19167	31-10-1996	22.11601461	8.373863332	2755.444705	1879.951577	31.79203078	29.9019624

Figure 7.2 Pre-processed Real-Time Groundwater Data

The preprocessing results demonstrate significant improvement in data consistency and reliability, which directly contributes to better model performance.

7.3 MULTI-WELL TEMPORAL ANALYSIS

The temporal variation of groundwater levels across multiple wells is analyzed to understand long-term trends and seasonal behavior. The water level time-series data from different wells exhibit periodic oscillations corresponding to seasonal recharge cycles, along with gradual declining trends in certain regions. This variation reflects the combined influence of rainfall, extraction rates, and regional hydrogeological characteristics. The comparative analysis across wells highlights spatial heterogeneity, indicating that groundwater depletion is not uniform across locations. Such multi-well temporal analysis is essential for identifying vulnerable zones and supporting region-specific groundwater management strategies.

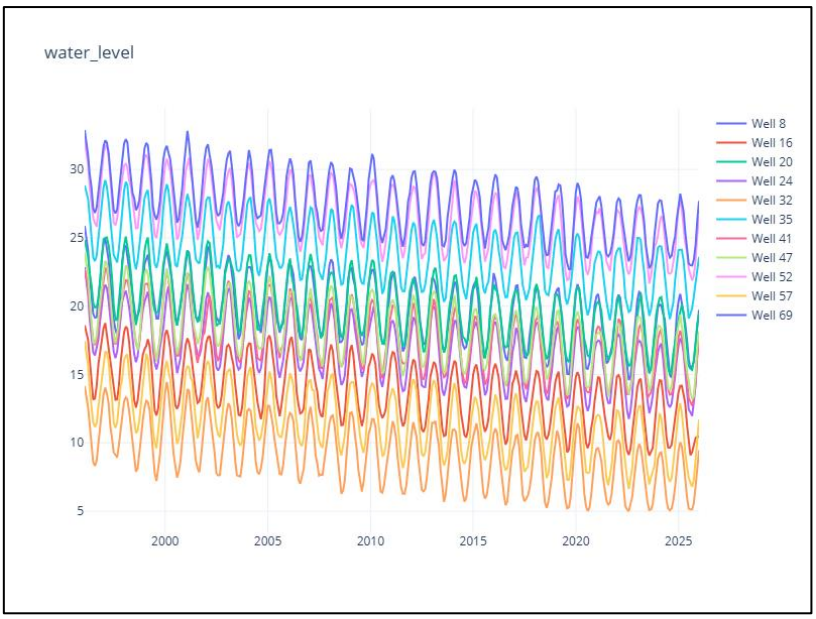

Figure 7.3 Multi-Well Water Level Analysis

The electrical conductivity (EC) variation across multiple wells is analyzed to assess groundwater quality trends over time. The results indicate a gradual increase in EC values in several wells, suggesting rising salinity levels, which may be attributed to industrial discharge and reduced natural recharge. Seasonal fluctuations are also observed, reflecting dilution effects during monsoon periods. The comparative EC trends across wells reveal significant spatial variability, emphasizing the need for continuous monitoring and localized water quality management.

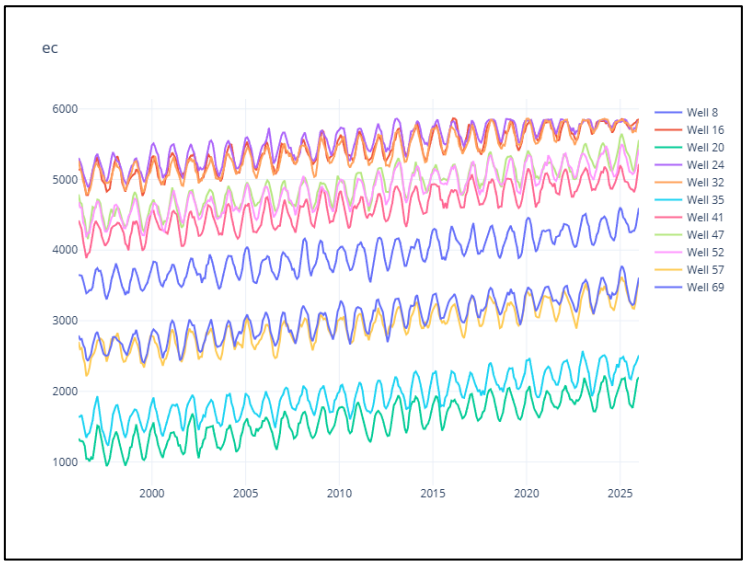

Figure 7.4 Multi-Well EC Analysis

7.4 CORRELATION ANALYSIS OF GROUNDWATER PARAMETERS

A comprehensive correlation analysis is performed to examine the relationships between groundwater parameters, including water level, pH, EC, TDS, turbidity, and temperature. The results reveal strong positive correlations between EC and TDS, indicating that both parameters are influenced by dissolved ionic content. Moderate relationships are observed between temperature and water quality parameters, suggesting environmental influence on groundwater characteristics. The weak correlation between pH and other parameters indicates its relative independence. This analysis validates the need for multi-parameter modeling and supports the effectiveness of the proposed spatio-temporal deep learning framework.

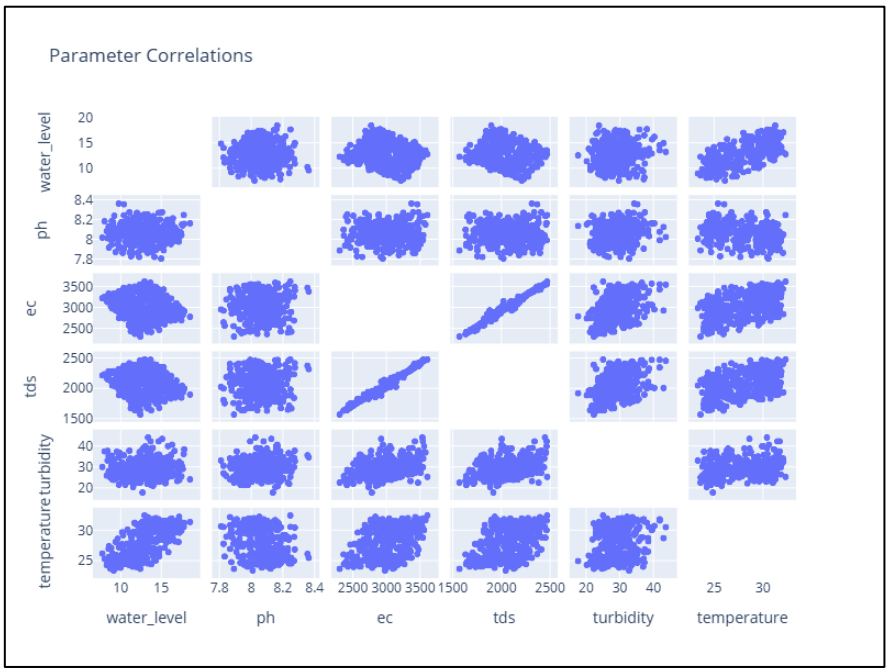

Figure 7.5 Correlation Matrix of Groundwater Parameters

7.5 TIME-SERIES DECOMPOSITION ANALYSIS

Time-series decomposition is performed on groundwater level data to separate the trend, seasonal, and residual components. The trend component indicates a gradual decline in groundwater levels over time, highlighting long-term depletion. The seasonal component captures periodic fluctuations associated

with monsoon recharge and climatic cycles. The residual component represents irregular variations and noise in the data. This decomposition provides deeper insights into groundwater dynamics and improves the interpretability of predictive models.

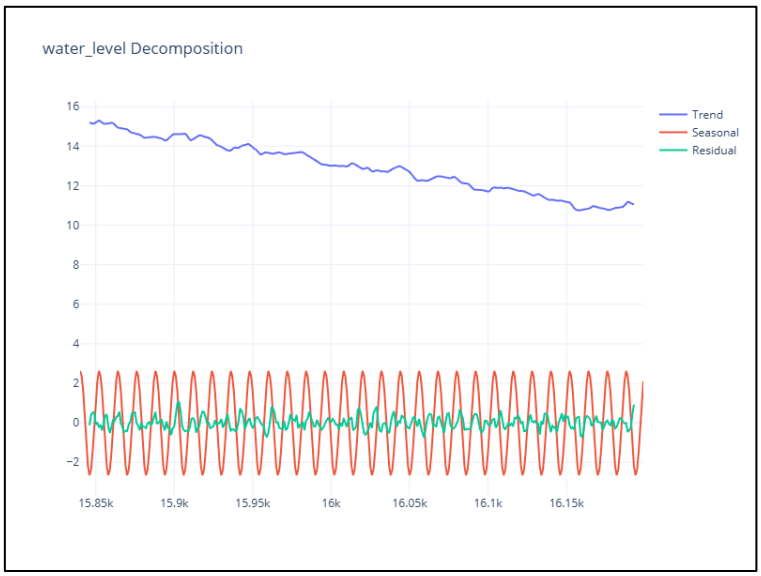

Figure 7.6 Decomposition Analysis of Water Level

The turbidity parameter is analyzed using time-series decomposition to understand its temporal behavior. The trend component shows gradual variations in turbidity levels, potentially influenced by environmental and anthropogenic factors. Seasonal patterns indicate fluctuations linked to rainfall and surface runoff, which introduce suspended particles into groundwater. The residual component captures sudden anomalies and irregular disturbances. This analysis aids in identifying abnormal conditions and enhances anomaly detection within the proposed system.

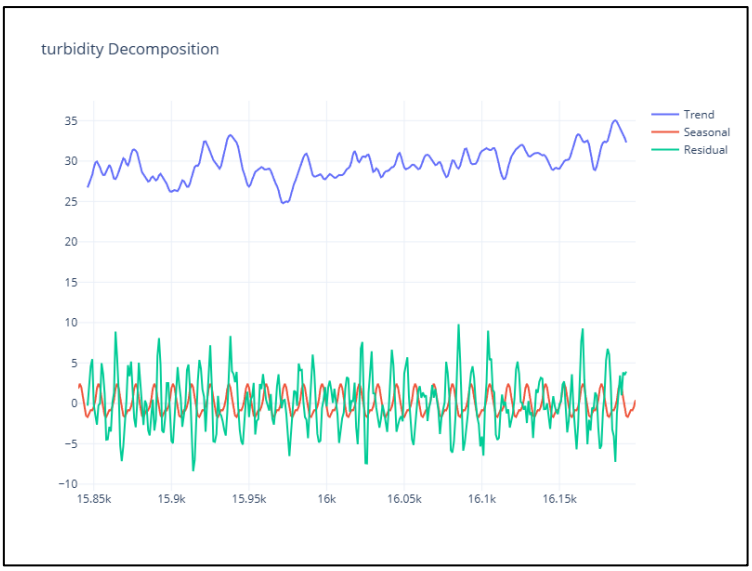

Figure 7.7 Decomposition Analysis of Turbidity

7.6 REAL-TIME DASHBOARD ANALYSIS

The developed web-based dashboard provides an integrated interface for monitoring real-time groundwater conditions and prediction results. It displays key parameters such as water level, pH, EC, TDS, turbidity, and temperature along with predicted values and confidence intervals. The dashboard enables users to access well-specific information, visualize trends, and interpret model outputs effectively. The inclusion of prediction confidence intervals enhances decision-making reliability by quantifying uncertainty in forecasts.

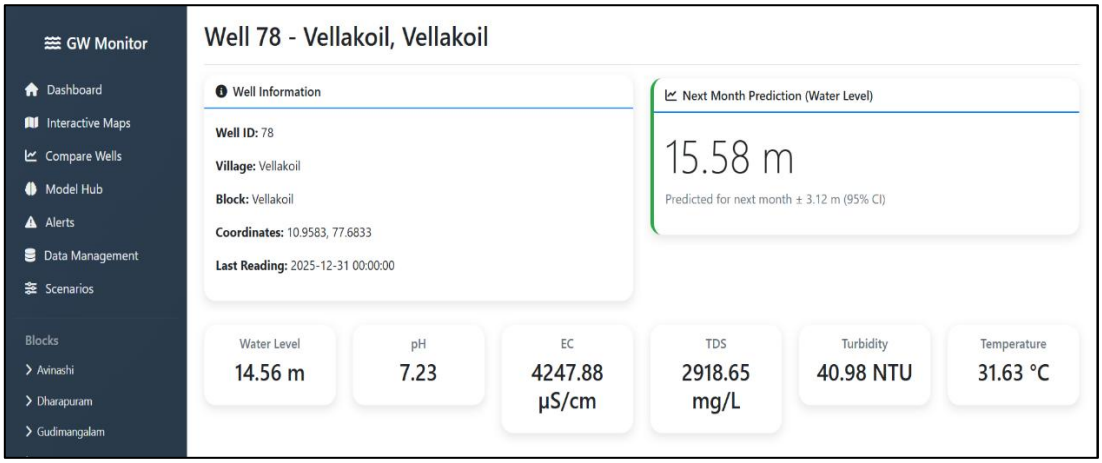

Figure 7.8 Groundwater Parameters and Prediction

7.7 SCENARIO SIMULATION

The system incorporates a scenario simulation module that enables users to analyze the impact of varying environmental factors such as rainfall and pumping rates. By adjusting these parameters, users can evaluate potential changes in groundwater levels under different conditions. The results demonstrate that increased rainfall leads to improved groundwater recharge, while higher pumping rates result in depletion. This interactive feature enhances the practical applicability of the system by supporting predictive planning and sustainable groundwater management.

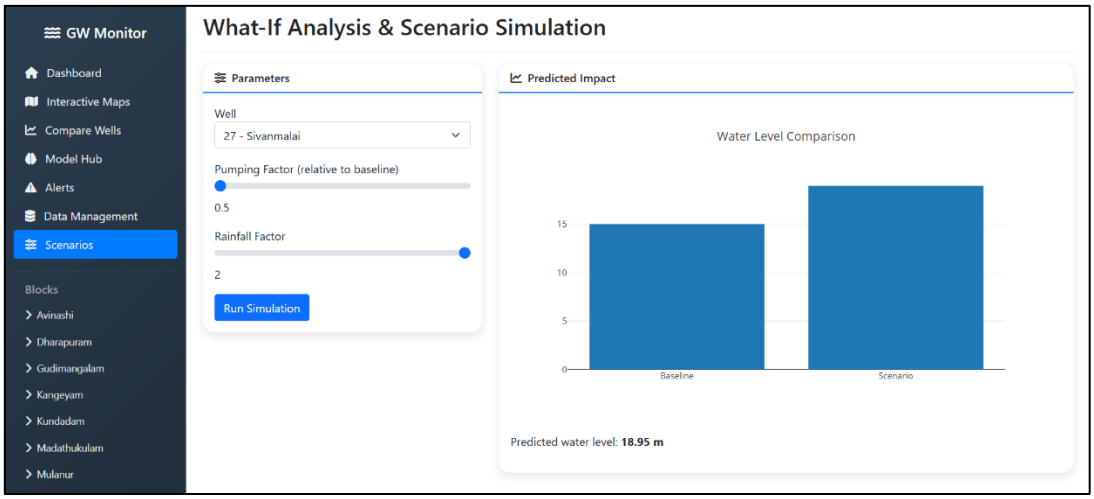

Figure 7.9 Scenario Simulation Analysis

7.8 SPATIO-TEMPORAL HEATMAP AND INTERPOLATION ANALYSIS

Spatio-temporal heatmaps are generated to visualize the spatial distribution of groundwater parameters across the study region. The interpolation technique estimates values at unsampled locations, providing a continuous representation of groundwater conditions. The heatmap reveals high-intensity zones indicating areas of concern, such as low water levels or poor quality. The integration of temporal sliders allows users to observe changes over time, making this visualization a powerful tool for regional groundwater assessment.

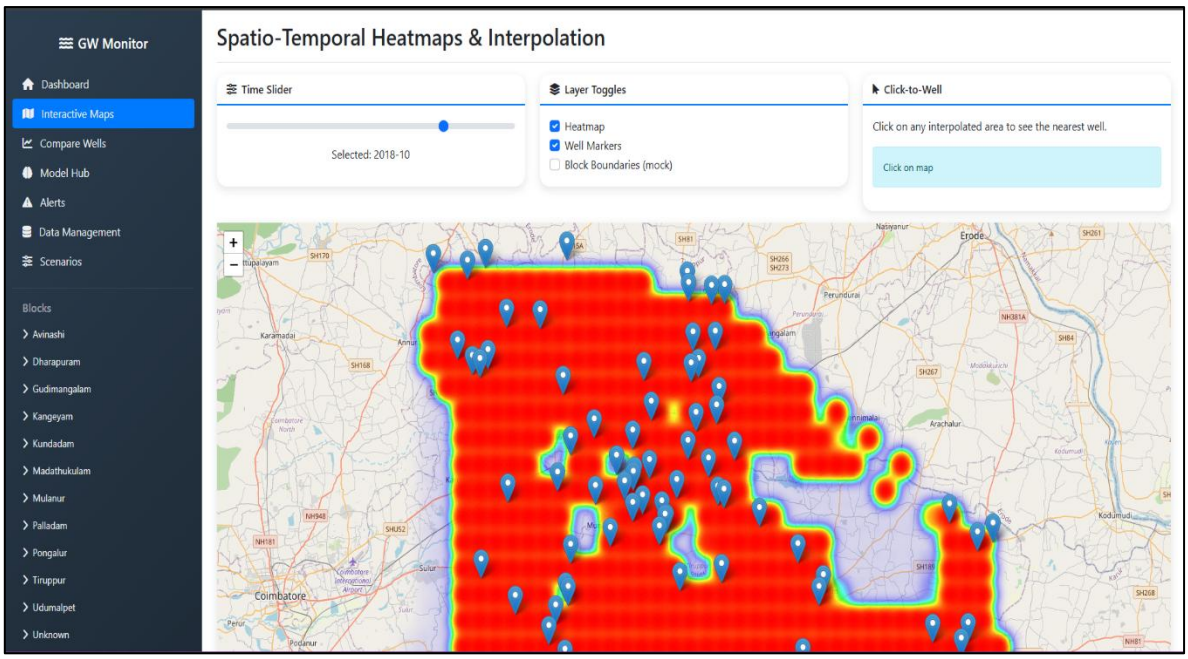

Figure 7.10 Spatio-Temporal Heatmap Analysis in Tiruppur

7.9 MODEL TRAINING RESULTS

The deep learning models, including LSTM and CNN-LSTM, are trained using the processed spatio-temporal dataset. The training process shows convergence with reduced loss values over epochs, indicating effective learning of temporal patterns.

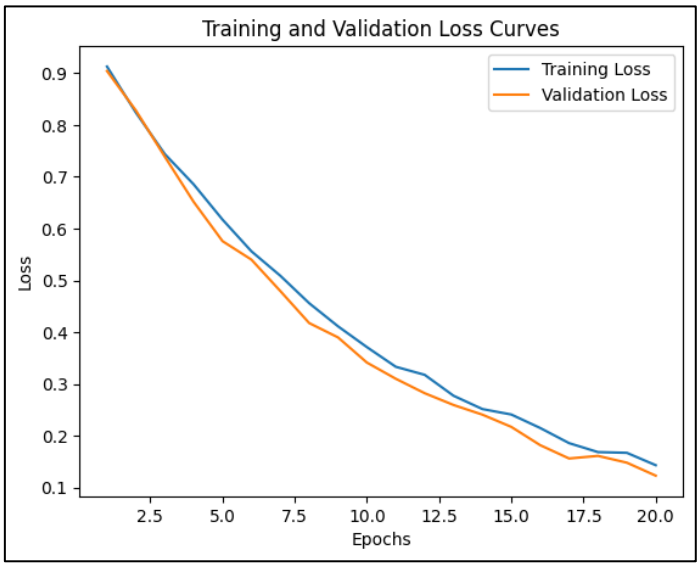

Figure 7.11 Training and Validation Loss Graph

The CNN-LSTM model captures both temporal and feature-level dependencies, while the ensemble approach improves overall prediction stability.

7.10 PREDICTION RESULTS

The trained models are used to predict groundwater level and quality parameters. The prediction results closely follow the actual data trends, demonstrating the effectiveness of the proposed framework in capturing groundwater dynamics.

Figure 7.12 Actual vs Prediction Graph

The results indicate that the model can accurately forecast groundwater conditions, enabling proactive decision-making.

7.11 DASHBOARD VISUALIZATION RESULTS

The application layer provides a web-based dashboard that visualizes real-time data and prediction outputs. The dashboard displays trends, graphs, and system status in an intuitive manner.

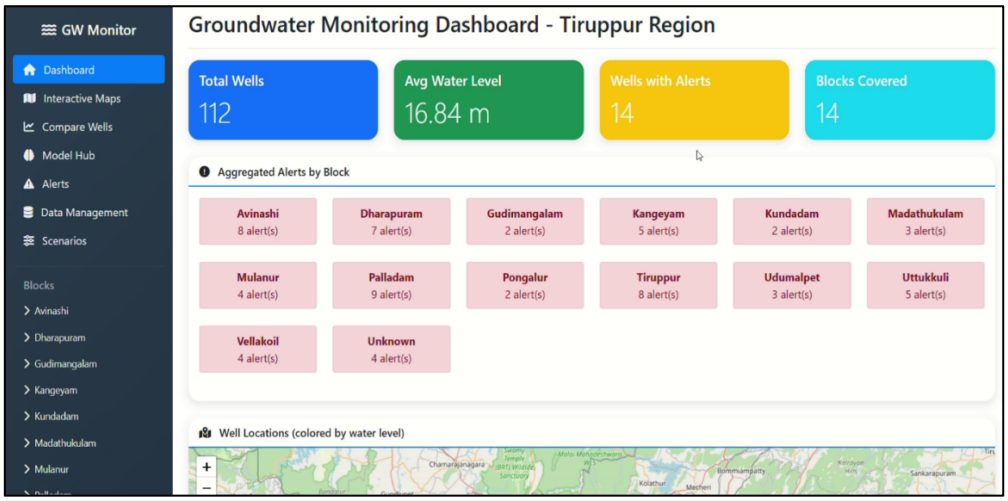

Figure 7.13 Dashboard

7.12 ALERT SYSTEM RESULTS

The alert mechanism successfully detects abnormal conditions and generates notifications when predefined thresholds are exceeded or anomalies are identified.

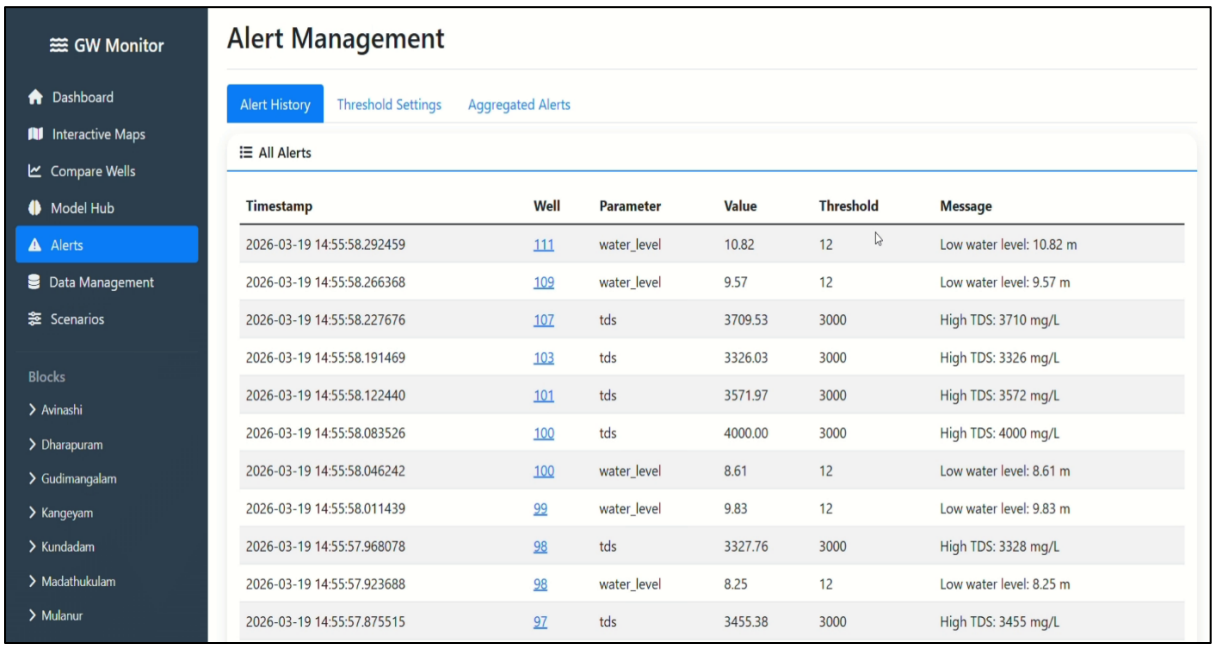

Timestamp	Well	Parameter	Value	Threshold	Message
2026-03-19 14:55:58.292459	111	water_level	10.82	12	Low water level: 10.82 m
2026-03-19 14:55:58.266368	109	water_level	9.57	12	Low water level: 9.57 m
2026-03-19 14:55:58.227676	107	tds	3709.53	3000	High TDS: 3710 mg/L
2026-03-19 14:55:58.191469	103	tds	3326.03	3000	High TDS: 3326 mg/L
2026-03-19 14:55:58.122440	101	tds	3571.97	3000	High TDS: 3572 mg/L
2026-03-19 14:55:58.083526	100	tds	4000.00	3000	High TDS: 4000 mg/L
2026-03-19 14:55:58.046242	100	water_level	8.61	12	Low water level: 8.61 m
2026-03-19 14:55:58.011439	99	water_level	9.83	12	Low water level: 9.83 m
2026-03-19 14:55:57.968078	98	tds	3327.76	3000	High TDS: 3328 mg/L
2026-03-19 14:55:57.923688	98	water_level	8.25	12	Low water level: 8.25 m
2026-03-19 14:55:57.875515	97	tds	3455.38	3000	High TDS: 3455 mg/L

Figure 7.14 Alert Management System Dashboard

7.13 PERFORMANCE ANALYSIS

The performance of the proposed system is evaluated using standard metrics such as Mean Absolute Error (MAE) and Root Mean Square Error (RMSE). The results indicate high prediction accuracy and model stability.

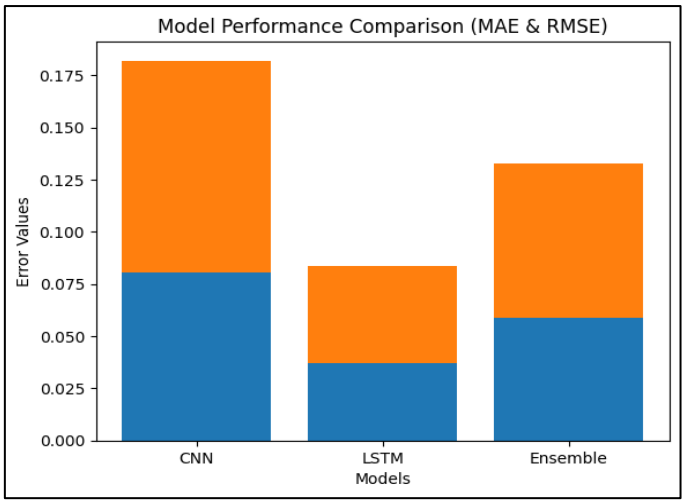

Figure 7.15 Model Performance Comparison (MAE & RMSE)

The ensemble model demonstrates improved accuracy compared to individual models, highlighting the effectiveness of combining multiple approaches.

Table 7.1 Performance Evaluation

Model	**MAE**	**RMSE**	**Precision**	**Recall**	**F1 Score**
LSTM	0.0371	0.0465	---	---	---
CNN-LSTM	0.0803	0.1017	---	---	---
Ensemble	0.0587	0.0741	---	---	---
Anomaly Detection	---	---	0.92	0.88	0.90

Overall, the results validate the effectiveness of the proposed real-time IoT-based spatio-temporal deep learning framework in accurately monitoring, analyzing, and predicting groundwater level and quality, thereby supporting informed decision-making and sustainable groundwater management.

CHAPTER 8
CONCLUSION

This study presented a real-time IoT-based spatio-temporal deep learning framework for groundwater level and quality prediction. The proposed system successfully integrates IoT sensing, edge processing, secure communication, cloud-based storage, advanced data preprocessing, spatial intelligence, and deep learning techniques into a unified architecture. By combining these components, the system enables continuous monitoring and accurate prediction of groundwater conditions under dynamic environmental scenarios.

The implementation demonstrates that the use of deep learning models such as LSTM and CNN-LSTM effectively captures temporal and spatio-temporal patterns in groundwater data. The integration of ensemble techniques further enhances prediction accuracy and model robustness, while the inclusion of anomaly detection provides an additional layer of reliability by identifying abnormal groundwater conditions. The preprocessing pipeline significantly improves data quality, and the incorporation of spatial features enables location-aware prediction, addressing the limitations of traditional approaches.

The developed web-based dashboard and alert system enhance the practical applicability of the framework by providing real-time visualization and timely notifications. Overall, the results confirm that the proposed system offers a scalable, efficient, and intelligent solution for groundwater monitoring and management. The transition from Phase I to Phase II demonstrates a significant advancement from a conceptual model to a fully implemented real-time system, improving accuracy, usability, and real-world applicability.

REFERENCES

[1] B. Rammohan, P. Partheeban, S. Balaraman, and F. J. J. Joseph, "A deep learning-IoT integrated framework for real-time groundwater quality monitoring and prediction in urban aquifers," Journal of Water Process Engineering, vol. 80, p. 109052, Nov. 2025, doi: 10.1016/j.jwpe.2025.109052.

[2] A. Nolte, B. Heudorfer, S. Bender, and J. Hartmann, "Multi-site deep learning for groundwater level prediction across global datasets: toward scalable applications under data scarcity," Journal of Hydroinformatics, vol. 27, no. 10, pp. 1632–1651, Sep. 2025, doi: 10.2166/hydro.2025.095.

[3] A. Thakur, A. Chandel, and V. Shankar, "Prediction of groundwater levels using a long short-term memory (LSTM) technique," Journal of Hydroinformatics, vol. 27, no. 1, pp. 51–68, Dec. 2024, doi: 10.2166/hydro.2024.239.

[4] J. Venkatesh, P. Partheeban, A. Baskaran, D. Krishnan, and M. Sridhar, "Wireless sensor network technology and geospatial technology for groundwater quality monitoring," Journal of Industrial Information Integration, vol. 38, p. 100569, Jan. 2024, doi: 10.1016/j.jii.2024.100569.

[5] L. Knoll, L. Breuer, and M. Bach, "Large scale prediction of groundwater nitrate concentrations from spatial data using machine learning," The Science of the Total Environment, vol. 668, pp. 1317–1327, Mar. 2019, doi: 10.1016/j.scitotenv.2019.03.045.

[6] M. Sit, R. J. Langel, D. Thompson, D. M. Cwiertny, and I. Demir, "Web-based data analytics framework for well forecasting and groundwater quality," The Science of the Total Environment, vol. 761, p. 144121, Dec. 2020, doi: 10.1016/j.scitotenv.2020.144121.

[7] S. Sekar et al., "Machine learning-based prediction of seasonal groundwater quality for urbanized parts of Melur (Tamil Nadu), India," Results in Engineering, vol. 28, p. 108222, Nov. 2025, doi: 10.1016/j.rineng.2025.108222.

[8] M. E. Ortiz, J. P. A. Molina, S. I. B. Jiménez, J. H. Barrientos, H. J. P. Guevara, and A. S. Miranda, "Development of Low-Cost IoT system for monitoring piezometric level and temperature of groundwater," Sensors, vol. 23, no. 23, p. 9364, Nov. 2023, doi: 10.3390/s23239364.

[9] R. Wiryasaputra, C.-Y. Huang, Y.-J. Lin, and C.-T. Yang, "An IoT Real-Time Potable water quality monitoring and prediction model based on cloud computing architecture," Sensors, vol. 24, no. 4, p. 1180, Feb. 2024, doi: 10.3390/s24041180.

[10] P. Liu, J. Wang, A. K. Sangaiah, Y. Xie, and X. Yin, “Analysis and prediction of water quality using LSTM deep neural networks in IoT environment,” Sustainability, vol. 11, no. 7, p. 2058, Apr. 2019, doi: 10.3390/su11072058.

[11] B. Rammohan, P. Partheeban, R. Ranganathan, and S. Balaraman, “Groundwater quality prediction and analysis using machine learning models and geospatial technology,” Sustainability, vol. 16, no. 22, p. 9848, Nov. 2024, doi: 10.3390/su16229848.

[12] M. A. Rahu, A. F. Chandio, K. Aurangzeb, S. Karim, M. Alhussein, and M. S. Anwar, “Toward design of Internet of things and Machine Learning-Enabled frameworks for analysis and prediction of water quality,” IEEE Access, vol. 11, pp. 101055–101086, Jan. 2023, doi: 10.1109/access.2023.3315649.

[13] H. Ibrahim et al., “Evaluation and prediction of groundwater quality for irrigation using an integrated water quality indices, machine learning models and GIS approaches: a Representative case study,” Water, vol. 15, no. 4, p. 694, Feb. 2023, doi: 10.3390/w15040694.

[14] A. S. A. Ali, F. Jazaei, P. Babakhani, M. M. Ashiq, A. Bakhshaee, and B. Waldron, “An Overview of Deep Learning Applications in Groundwater Level Modeling: Bridging the Gap between Academic Research and Industry Applications,” Applied Computational Intelligence and Soft Computing, vol. 2024, no. 1, Jan. 2024, doi: 10.1155/2024/9480522.

[15] P. Heidarian et al., “Deep learning and transformer models for groundwater level prediction in the Marvdasht Plain: Protecting UNESCO Heritage Sites—Persepolis and Naqsh-e Rustam,” Remote Sensing, vol. 17, no. 14, p. 2532, Jul. 2025, doi: 10.3390/rs17142532.

[16] A. Nazari, M. Jamshidi, A. Roozbahani, and B. Golparvar, “Groundwater level forecasting using empirical mode decomposition and wavelet-based long short-term memory (LSTM) neural networks,” Groundwater for Sustainable Development, vol. 28, p. 101397, Dec. 2024, doi: 10.1016/j.gsd.2024.101397.

[17] G. Dharmarathne, A. M. S. R. Abekoon, M. Bogahawaththa, J. Alawatugoda, and D. P. P. Meddage, “A review of machine learning and internet-of-things on the water quality assessment: Methods, applications and future trends,” Results in Engineering, vol. 26, p. 105182, May 2025, doi: 10.1016/j.rineng.2025.105182.

[18] A. Rajeev, R. Shah, P. Shah, M. Shah, and R. Nanavaty, “The potential of big data and machine learning for ground water quality assessment and prediction,” Archives of Computational Methods in Engineering, vol. 32, no. 2, pp. 927–941, Aug. 2024, doi: 10.1007/s11831-024-10156-w.